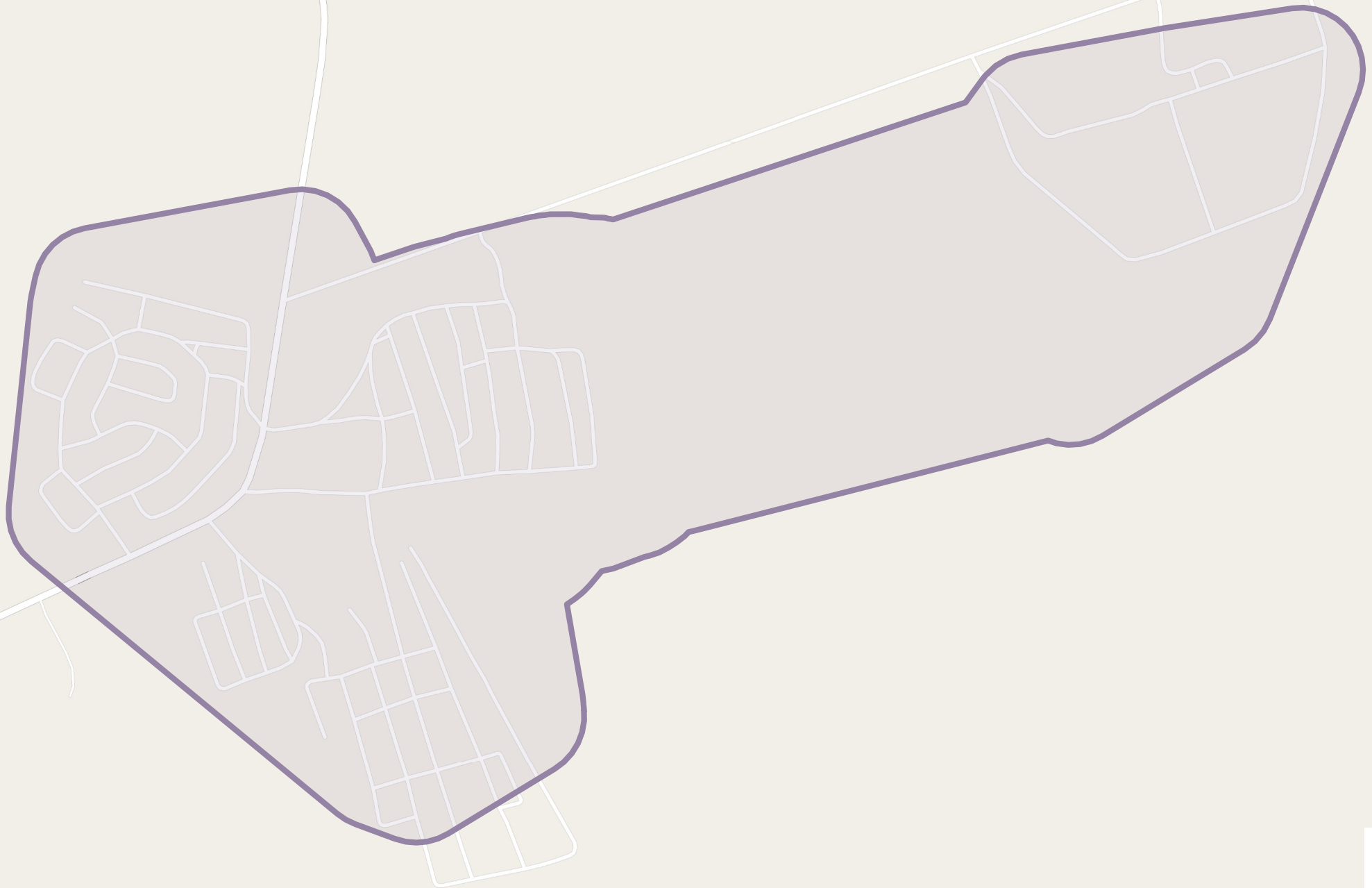

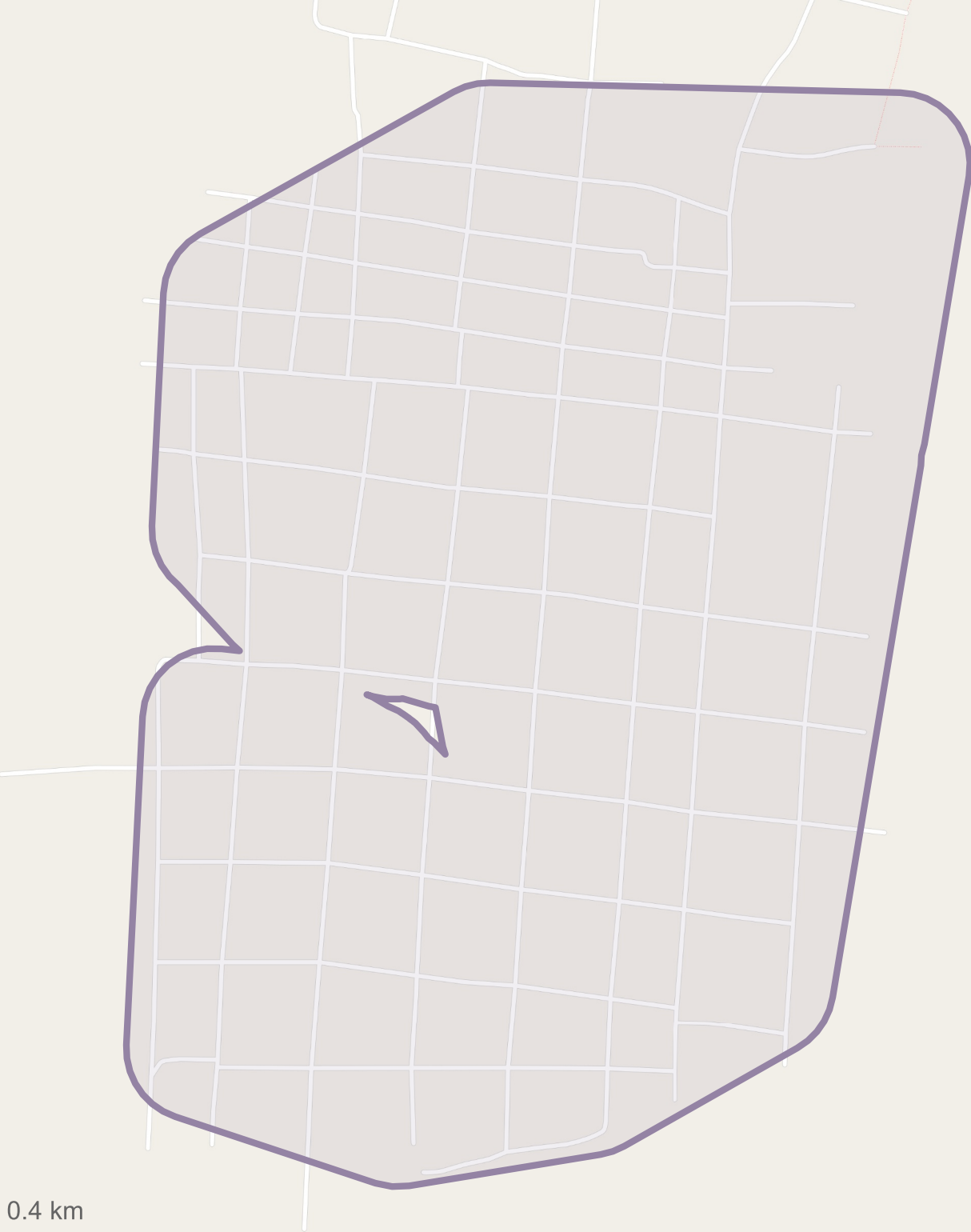


Alma



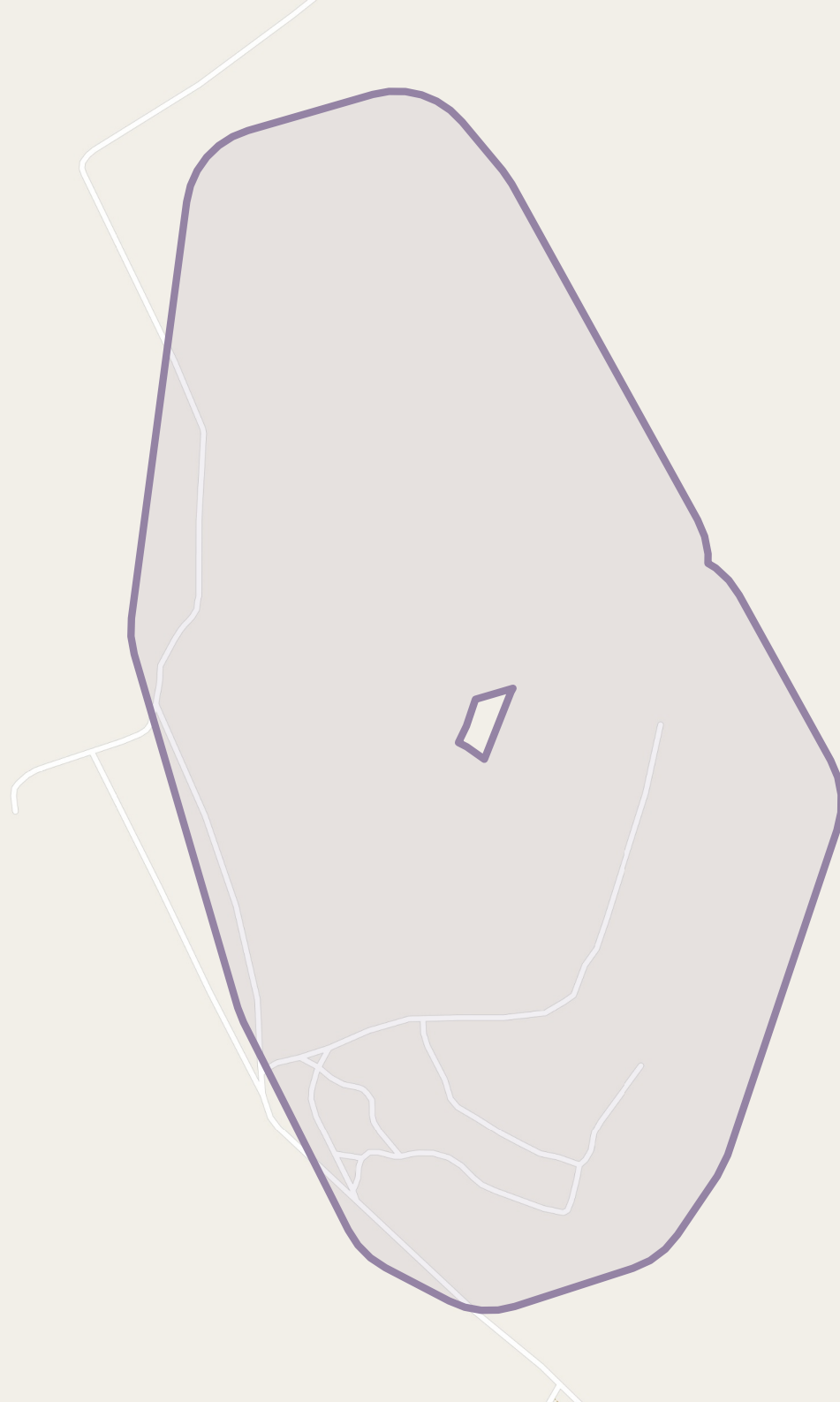
1:9,341

Bokwidi



1:9,270

Boschdraai

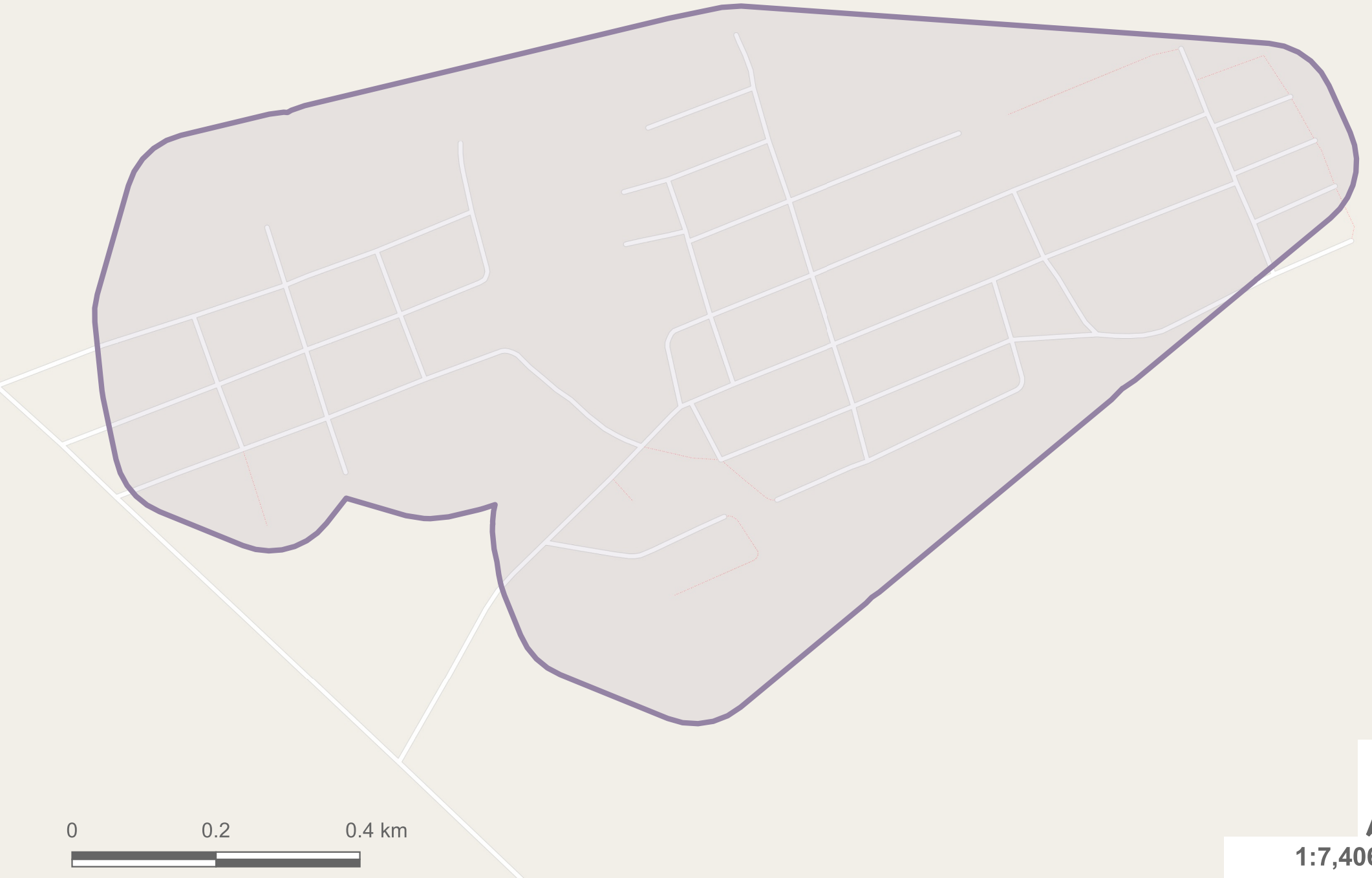


0 0.2 0.4 km



1:8,537

Chere



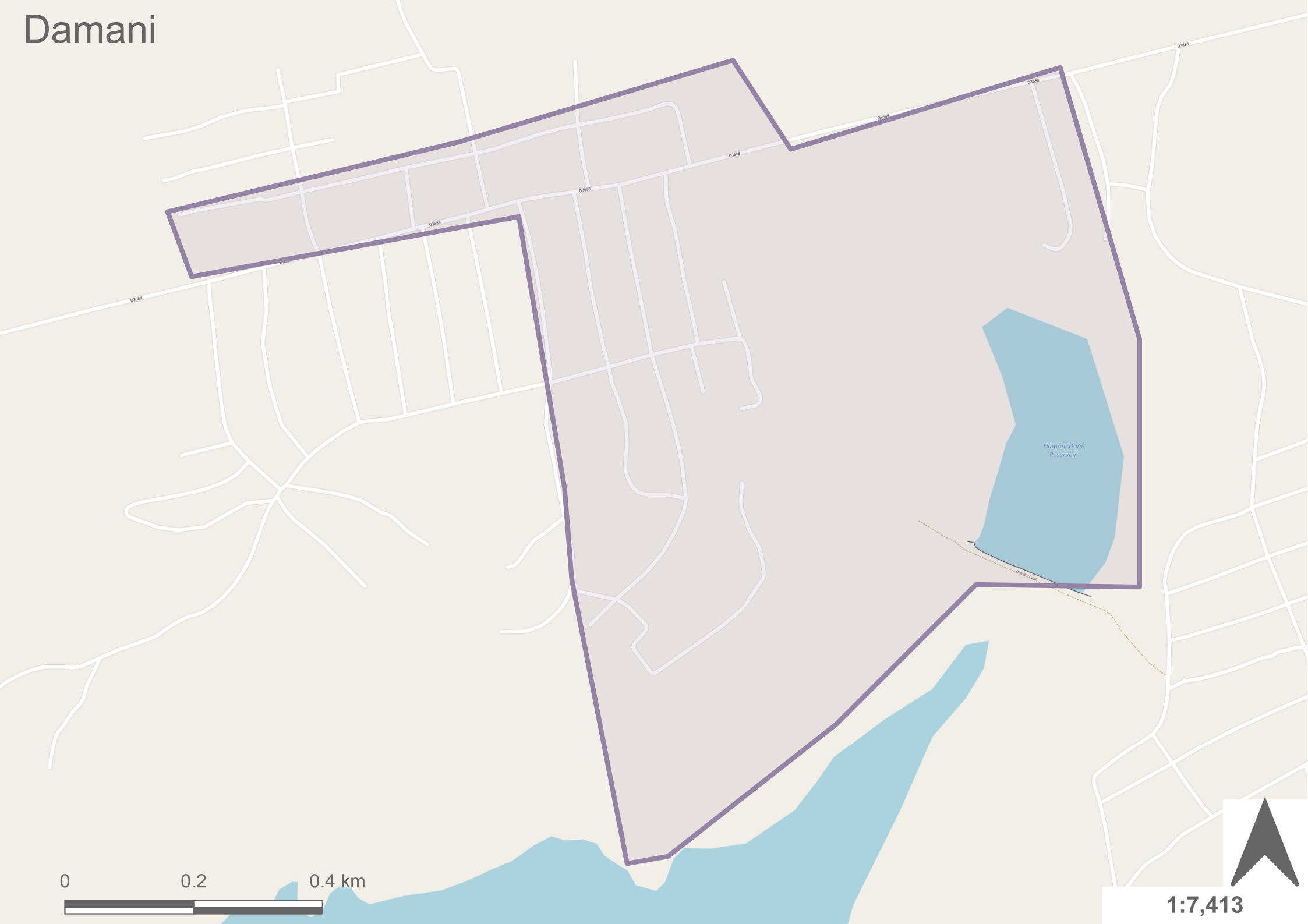
0 0.2 0.4 km



1:7,406



Damani

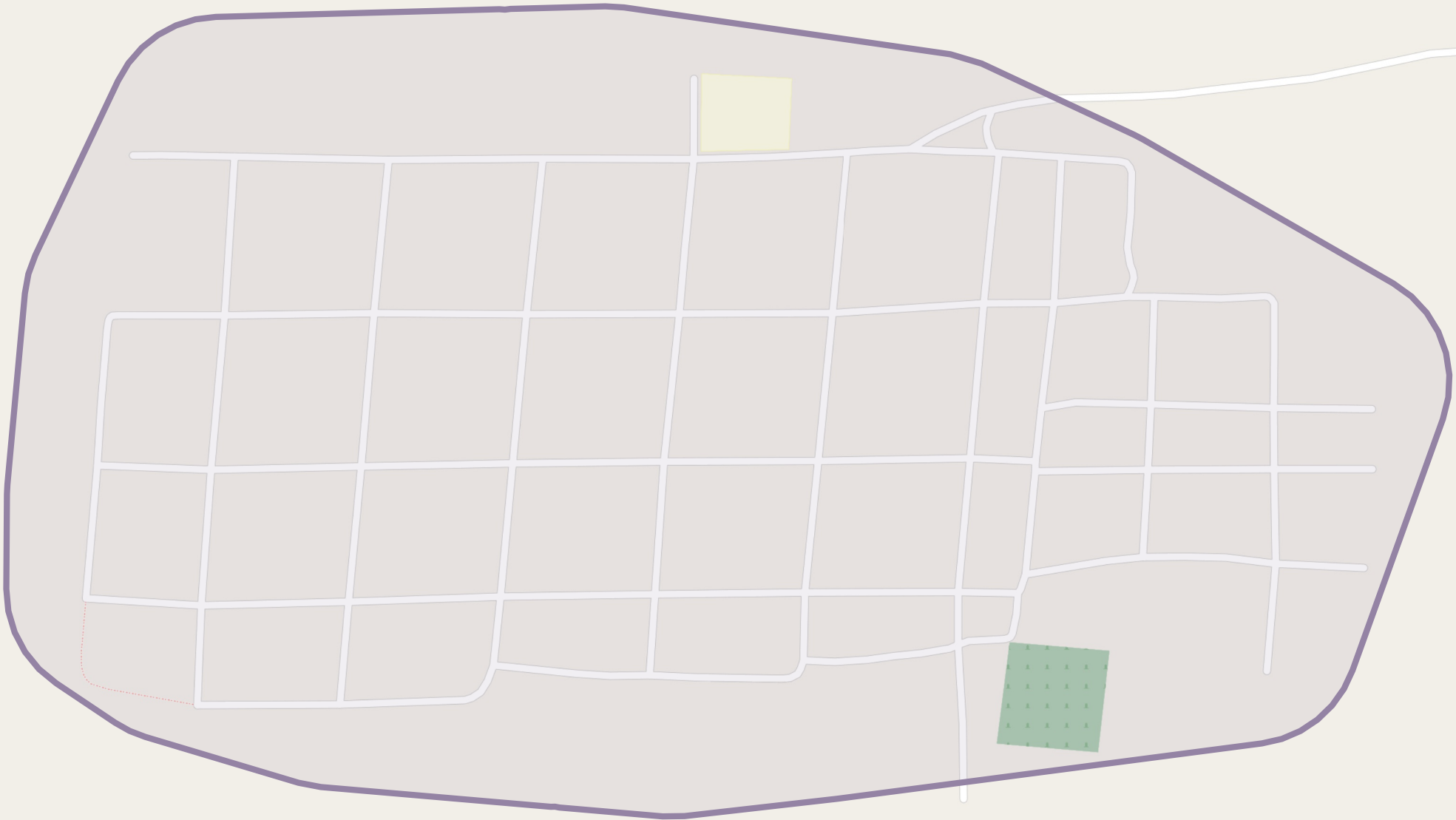


0 0.2 0.4 km



1:7,413

Dikgokgopheng

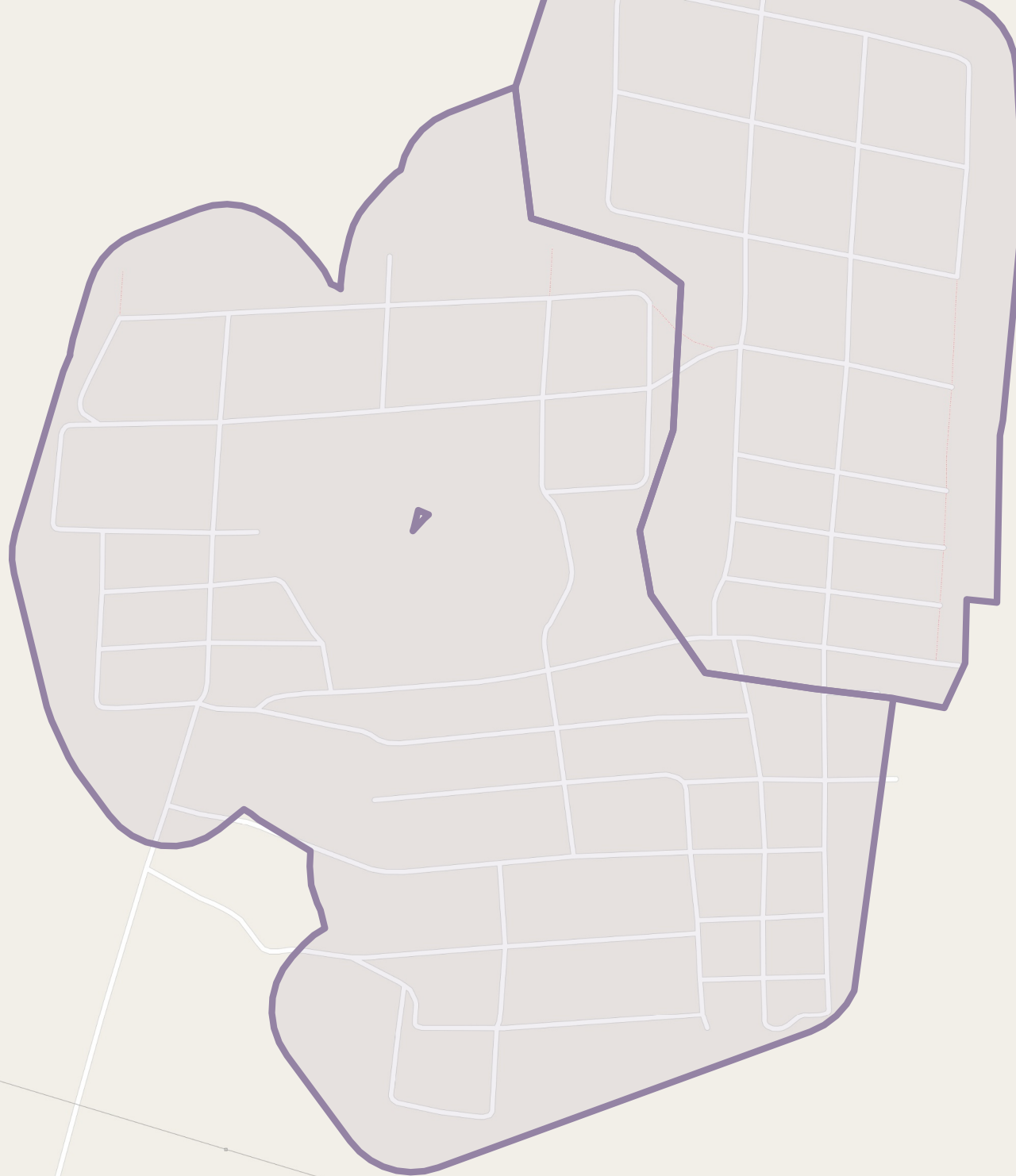


0 0.2 0.4 km



1:5,474

Dipere



0 0.2 0.4 km



1:8,498

GaChokoe

0 0.2 0.4 km



1:8,576



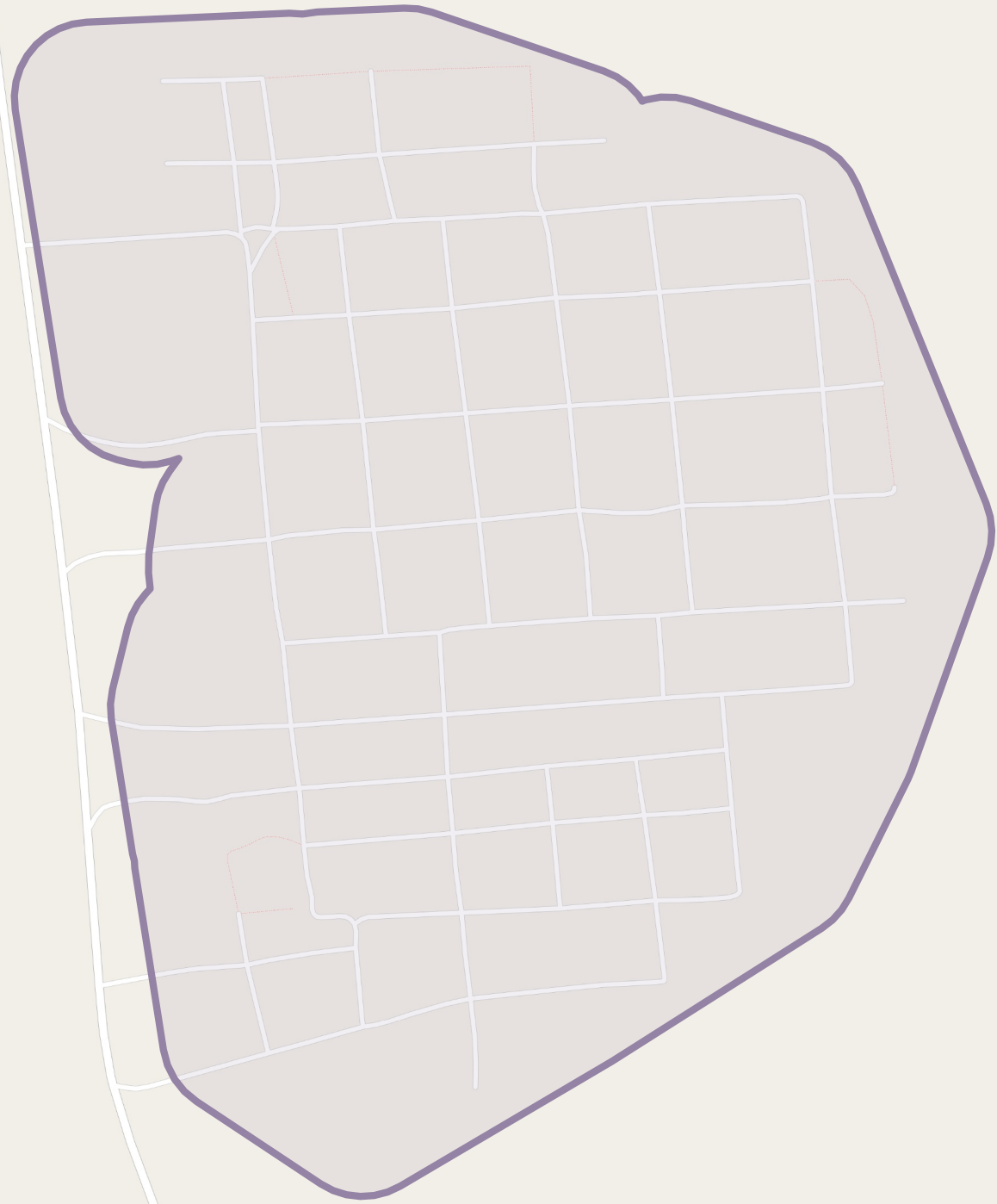
GaHlako



0 0.2 0.4 km

1:11,079

GaMalope

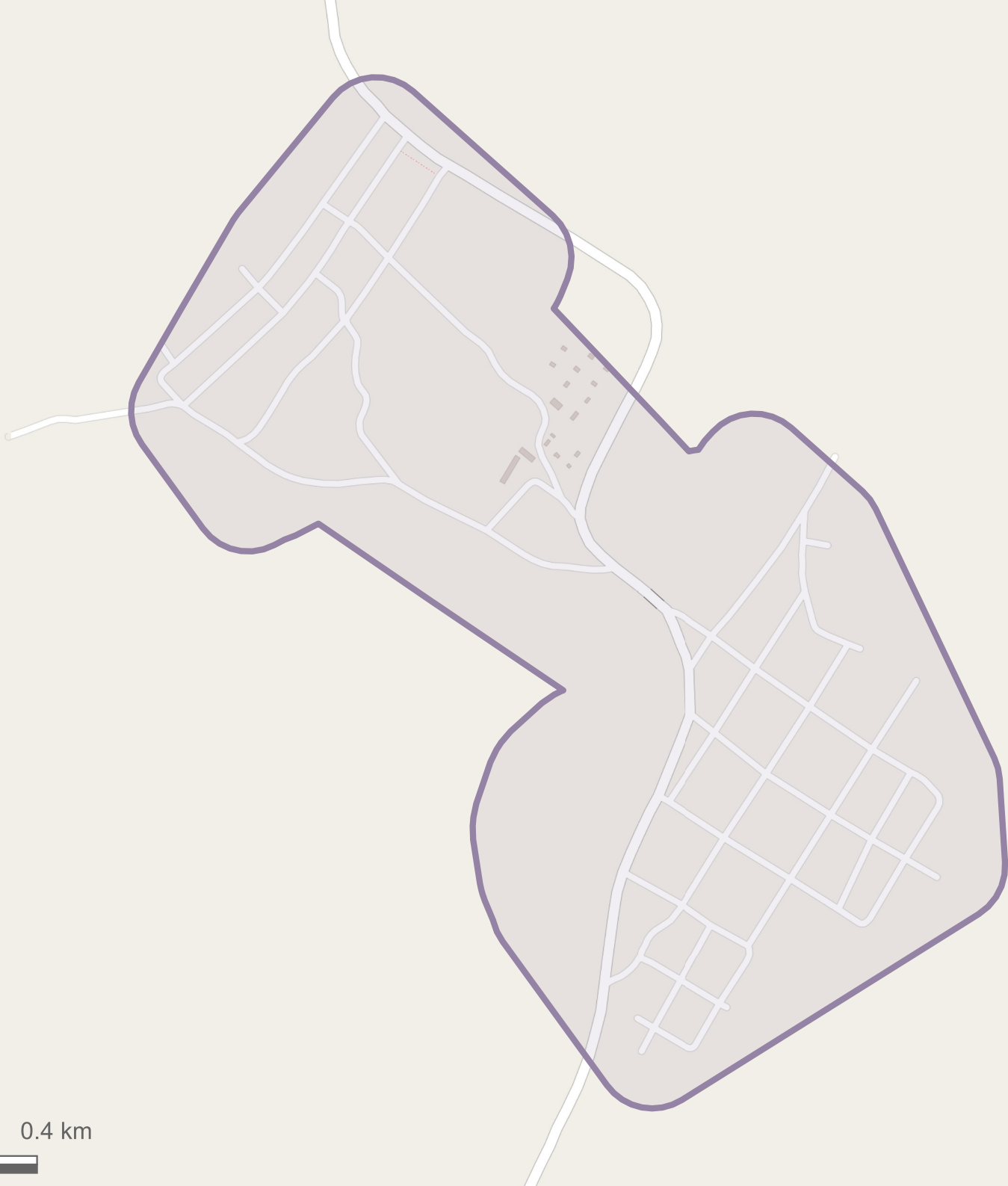


0 0.2 0.4 km



1:9,419

GaMasipa



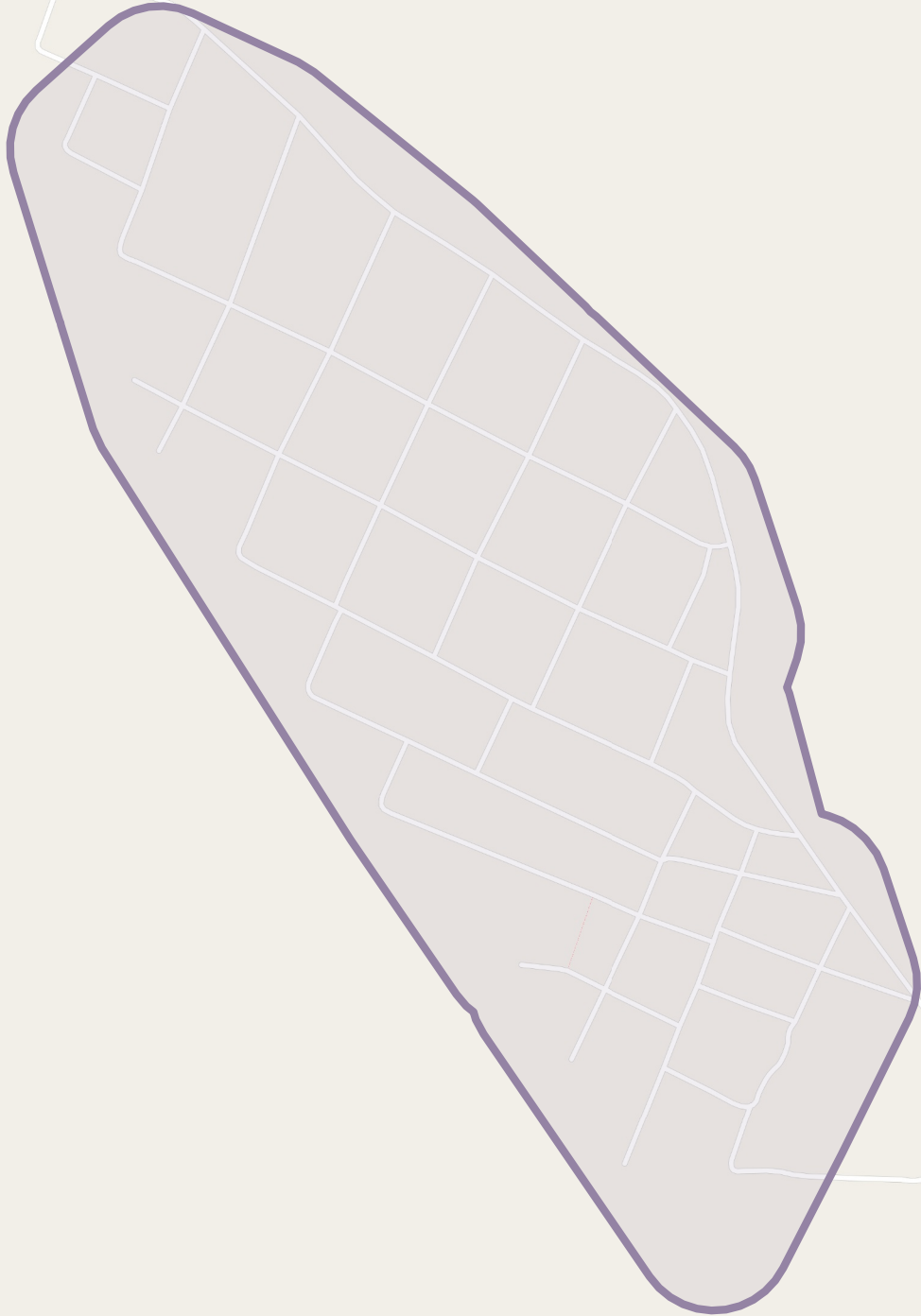
0 0.2 0.4 km



1:11,006



GaMathekga

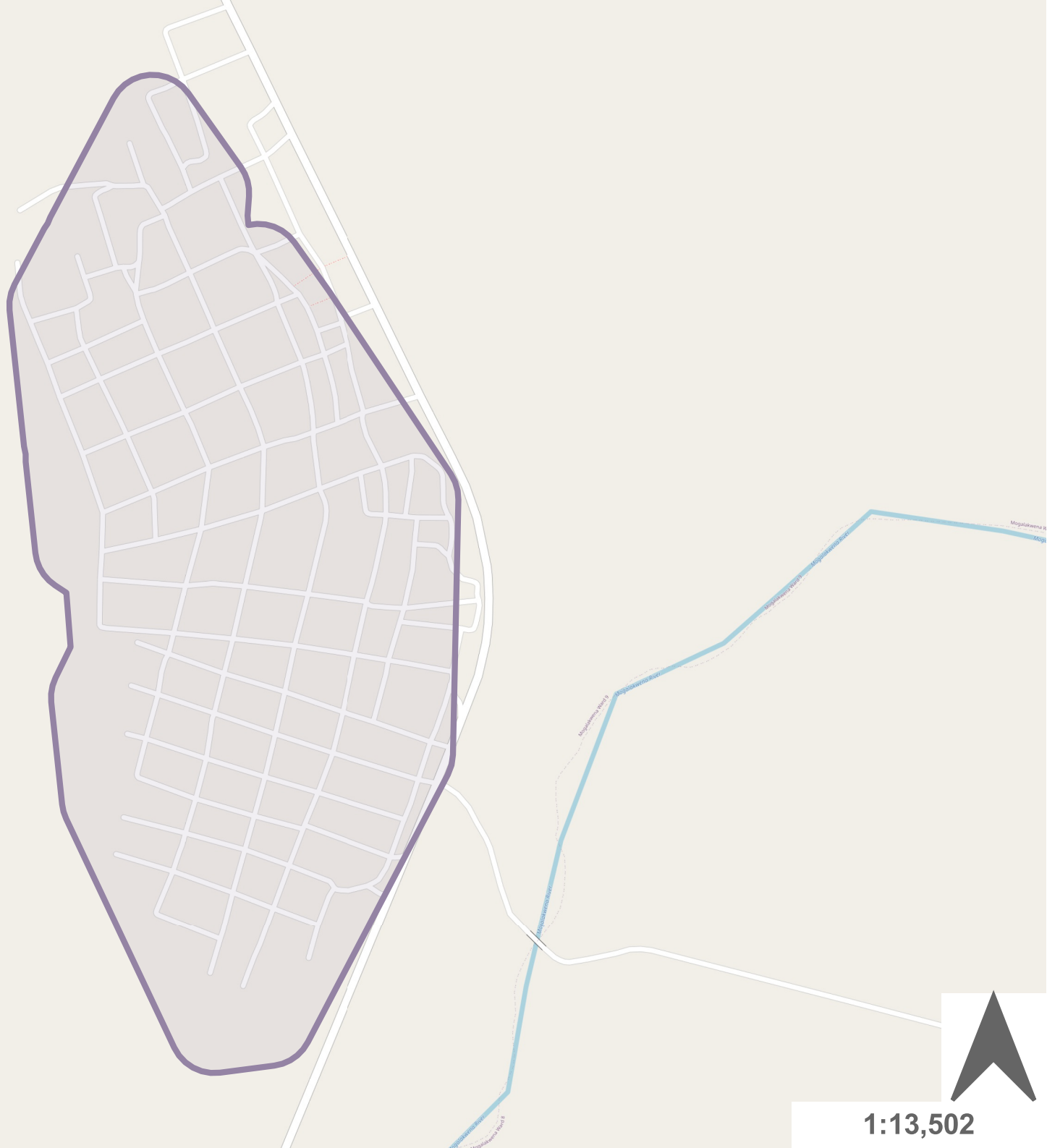


0 0.2 0.4 km



1:10,001

GaMolekwa



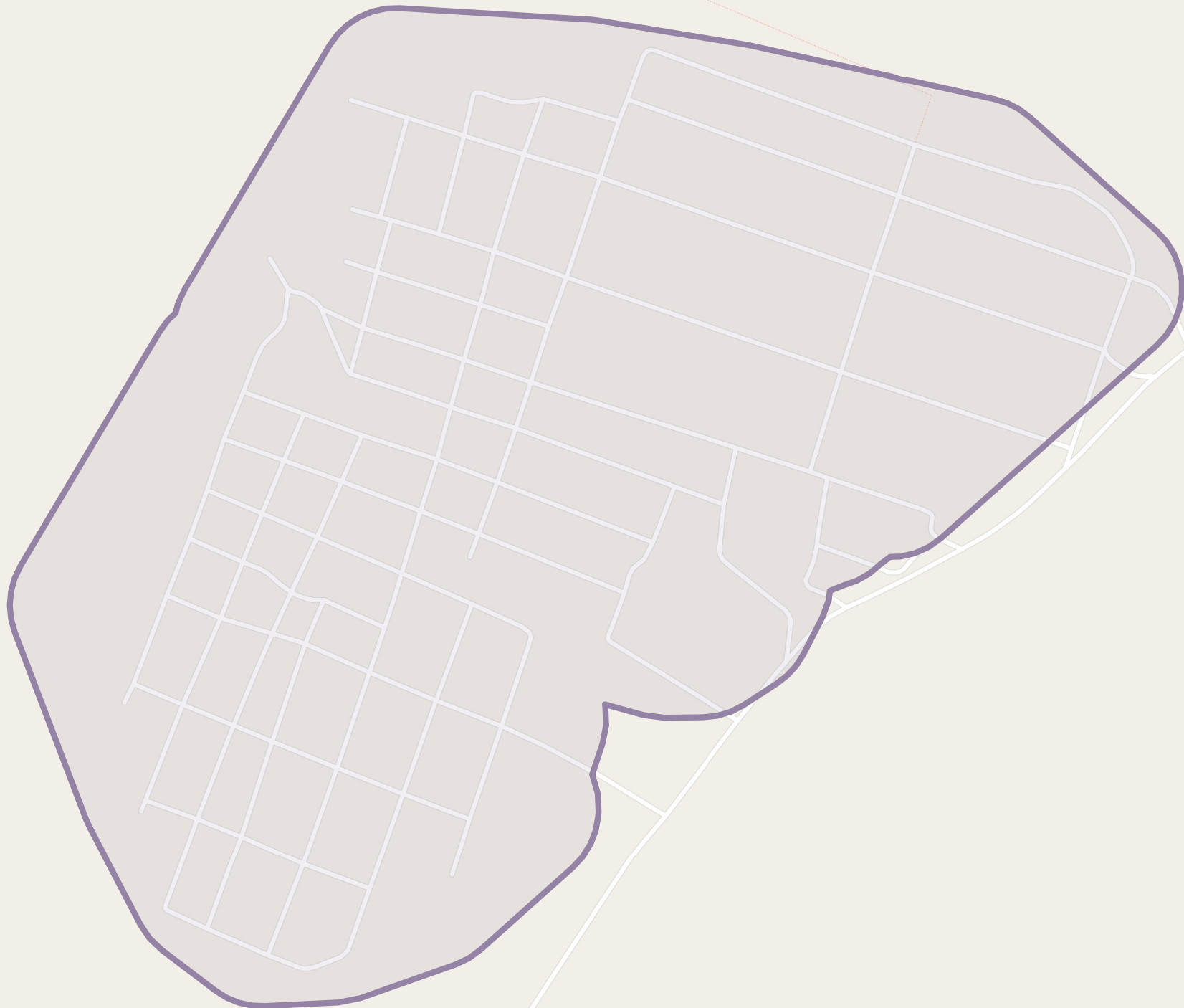
0 0.2 0.4 km



1:13,502



GaMonare

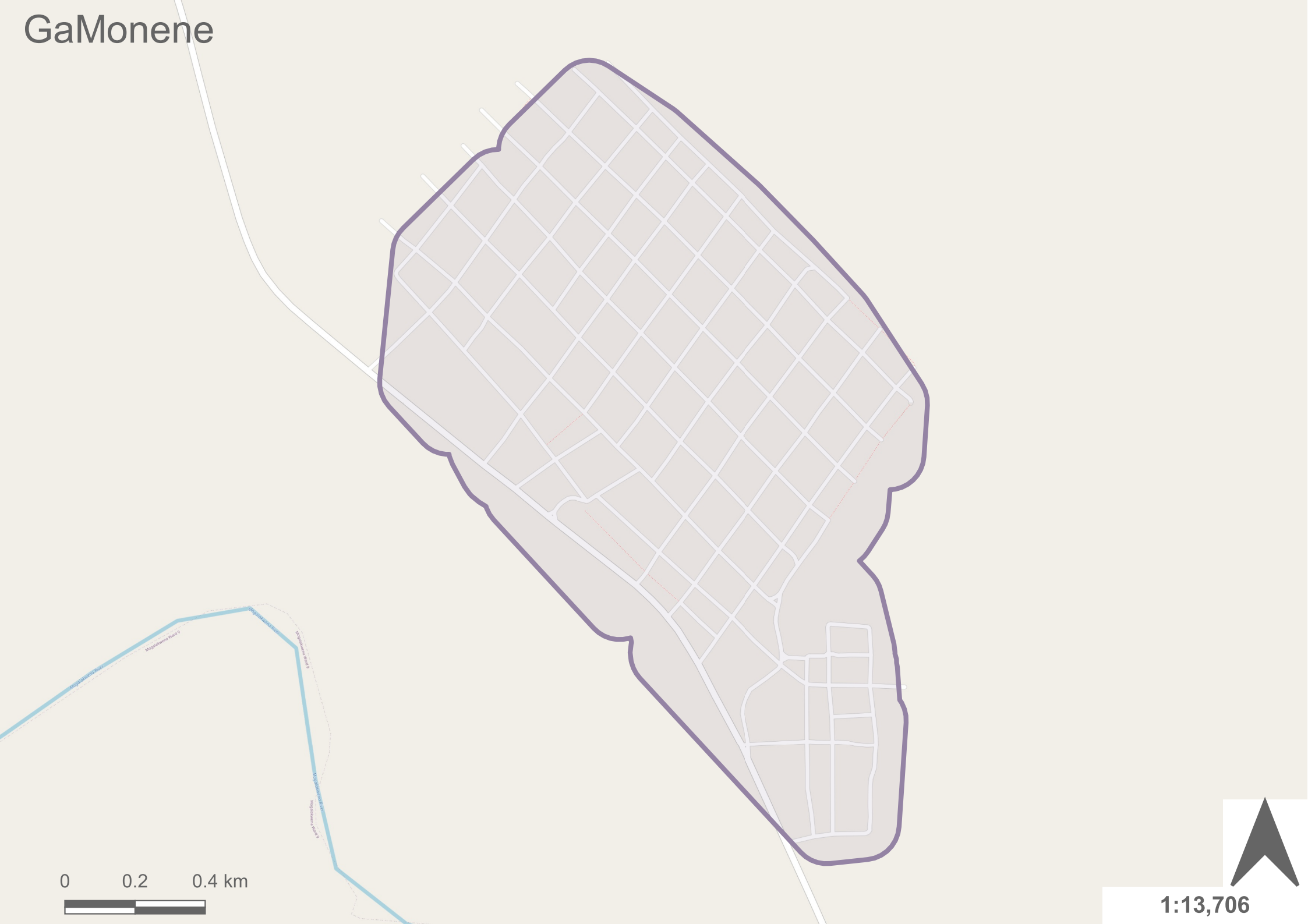


0 0.2 0.4 km



1:7,732

GaMonene



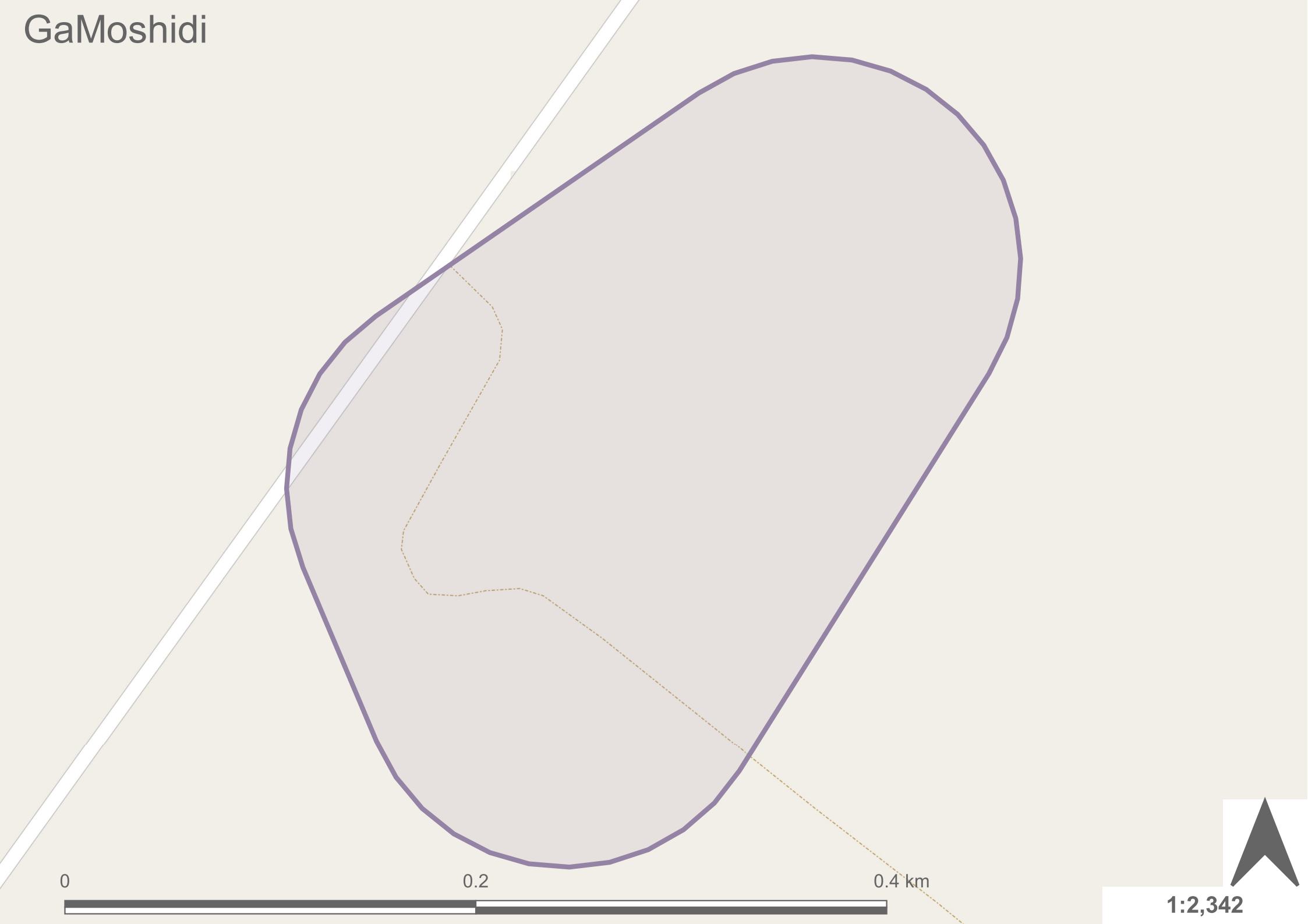
0 0.2 0.4 km



1:13,706



GaMoshidi



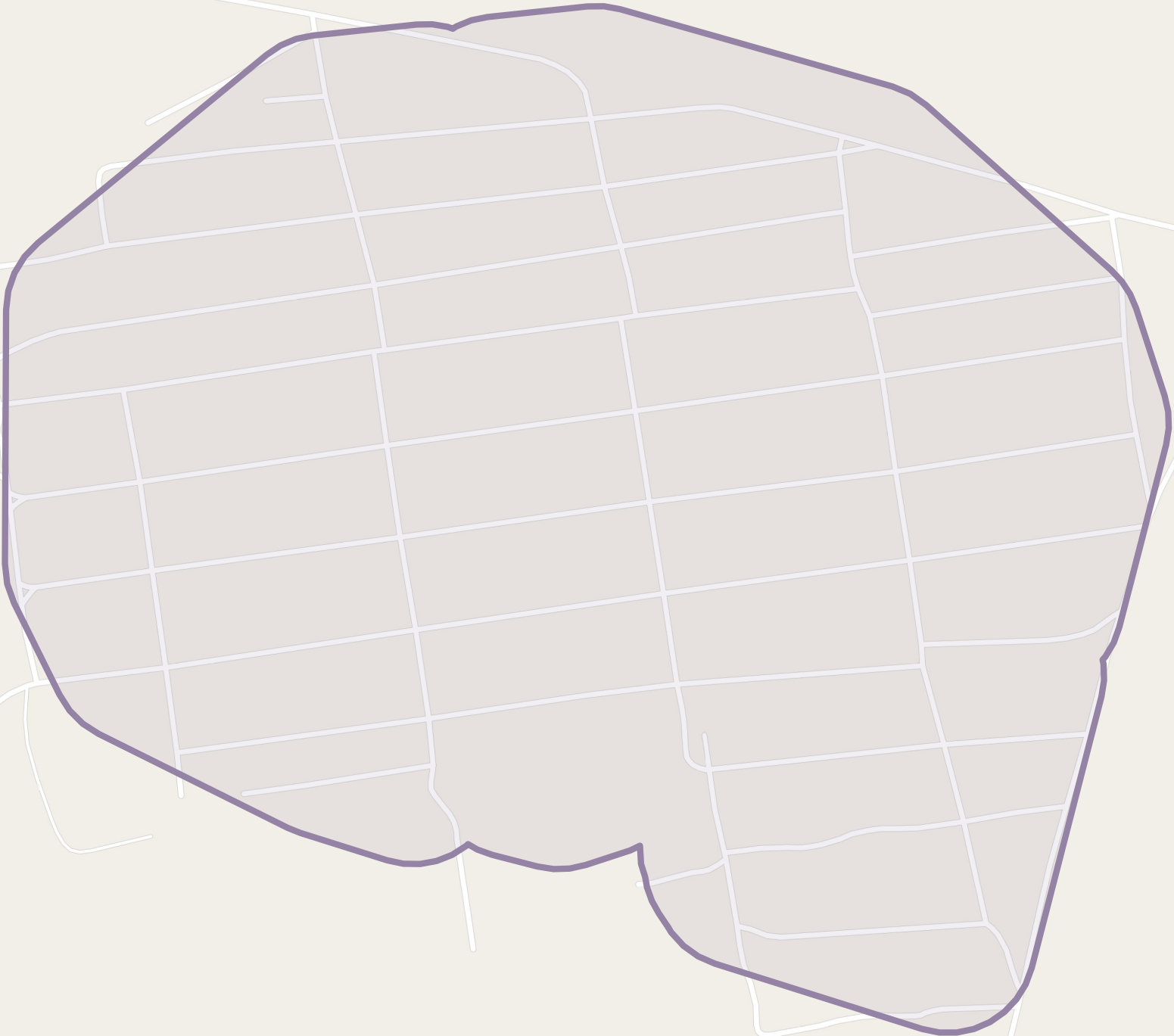
0

0.2

0.4 km

1:2,342

GaNkidikitlana



1:7,212

GaRapadi



0 0.2 0.4 km

1:6,007

Govhu

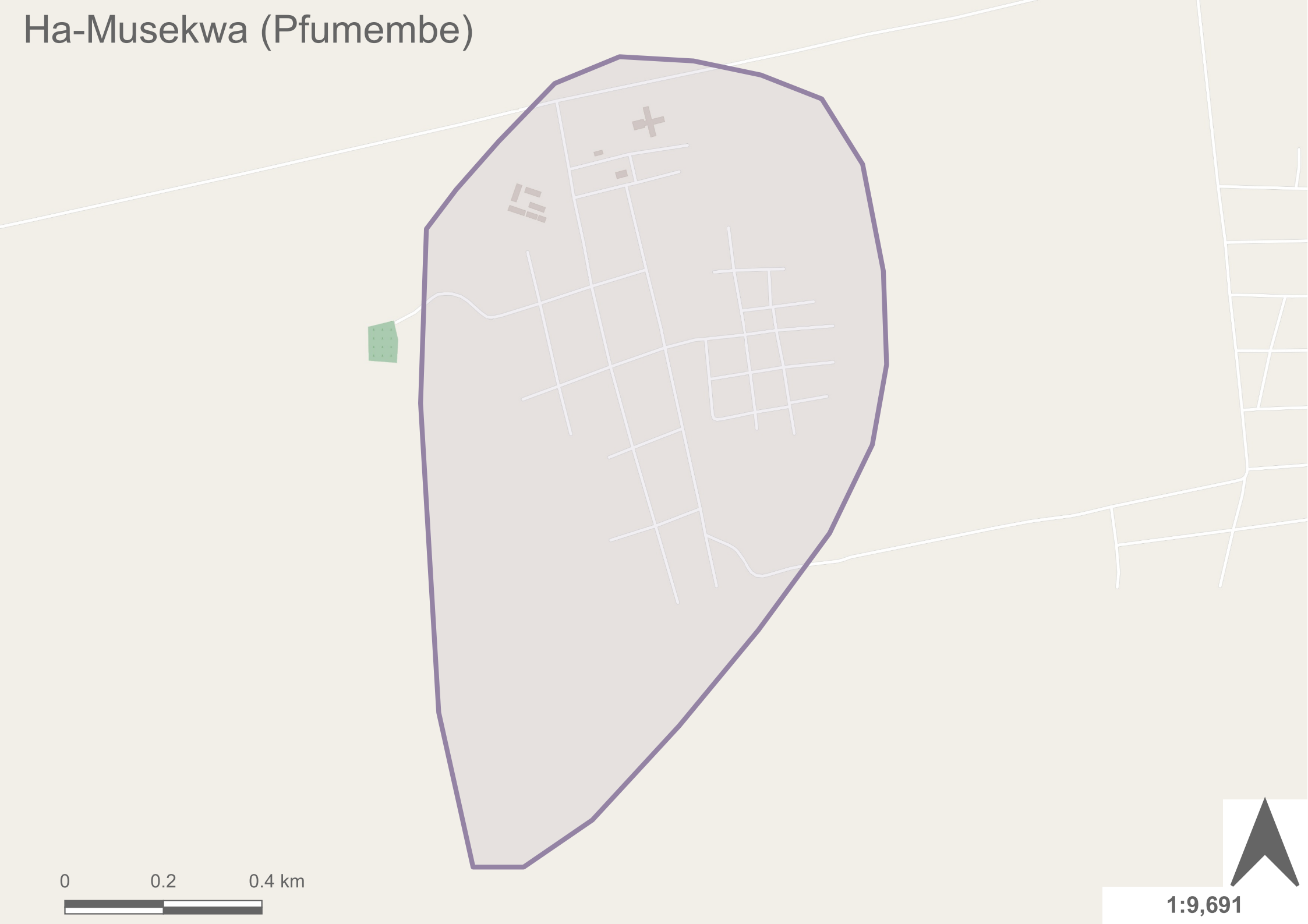


0 0.2 0.4 km



1:16,113

Ha-Musekwa (Pfumembe)



0 0.2 0.4 km



1:9,691

Hermansdal

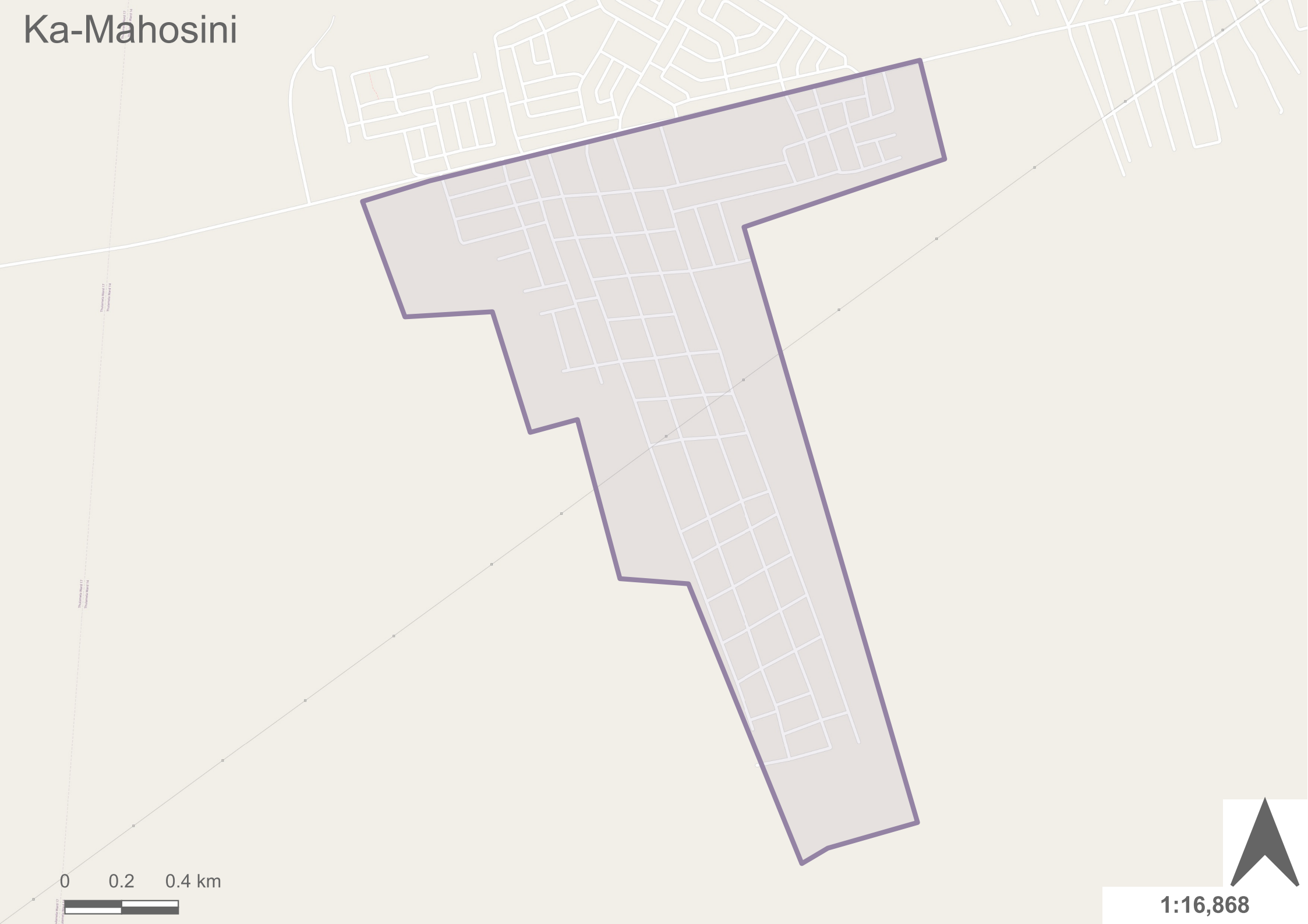


0 0.2 0.4 km



1:10,864

Ka-Mahosini



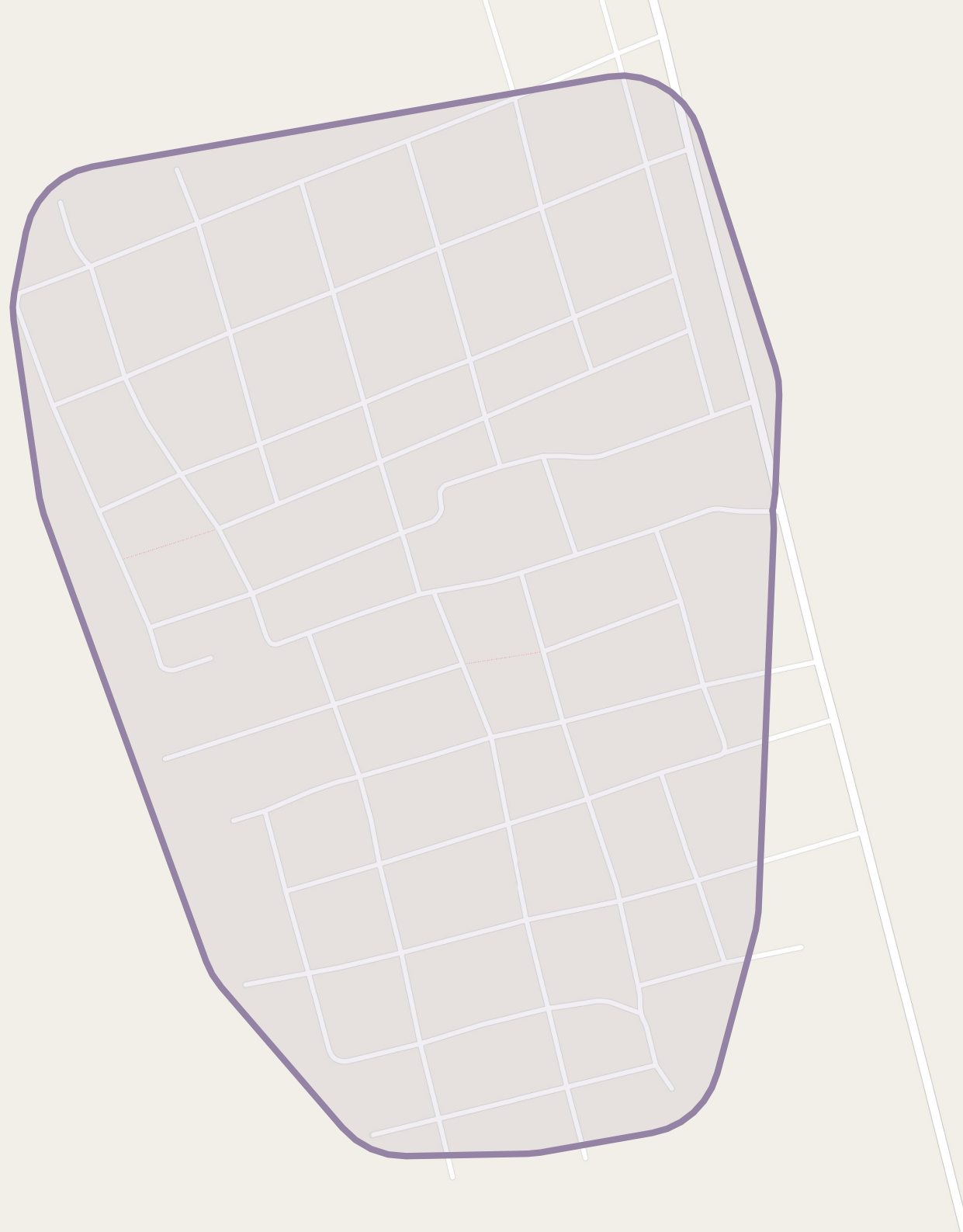
0 0.2 0.4 km



1:16,868



Kabeana

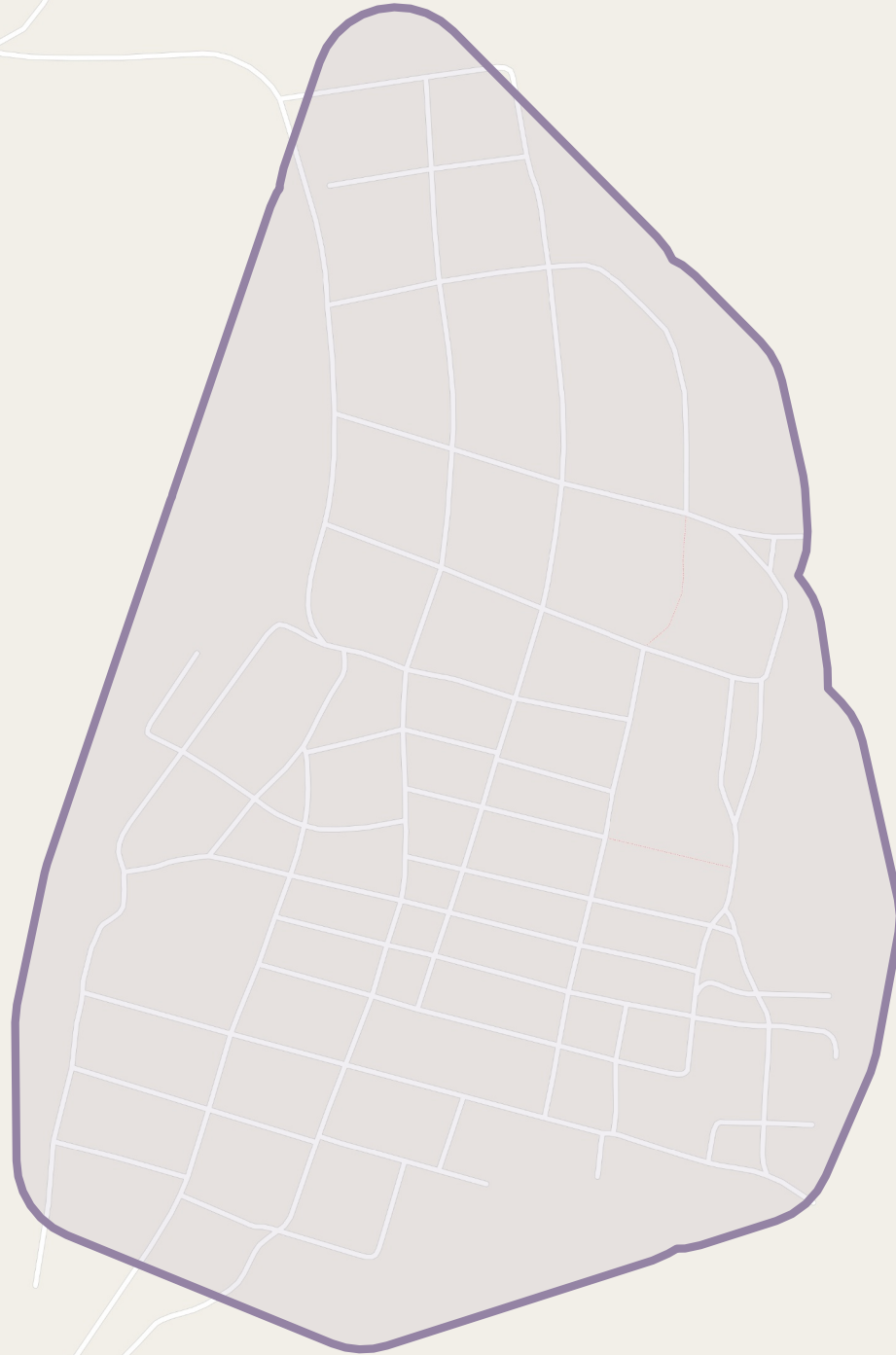


0 0.2 0.4 km



1:7,823

Kaditshwene



0 0.2 0.4 km



1:9,943

Kgopung



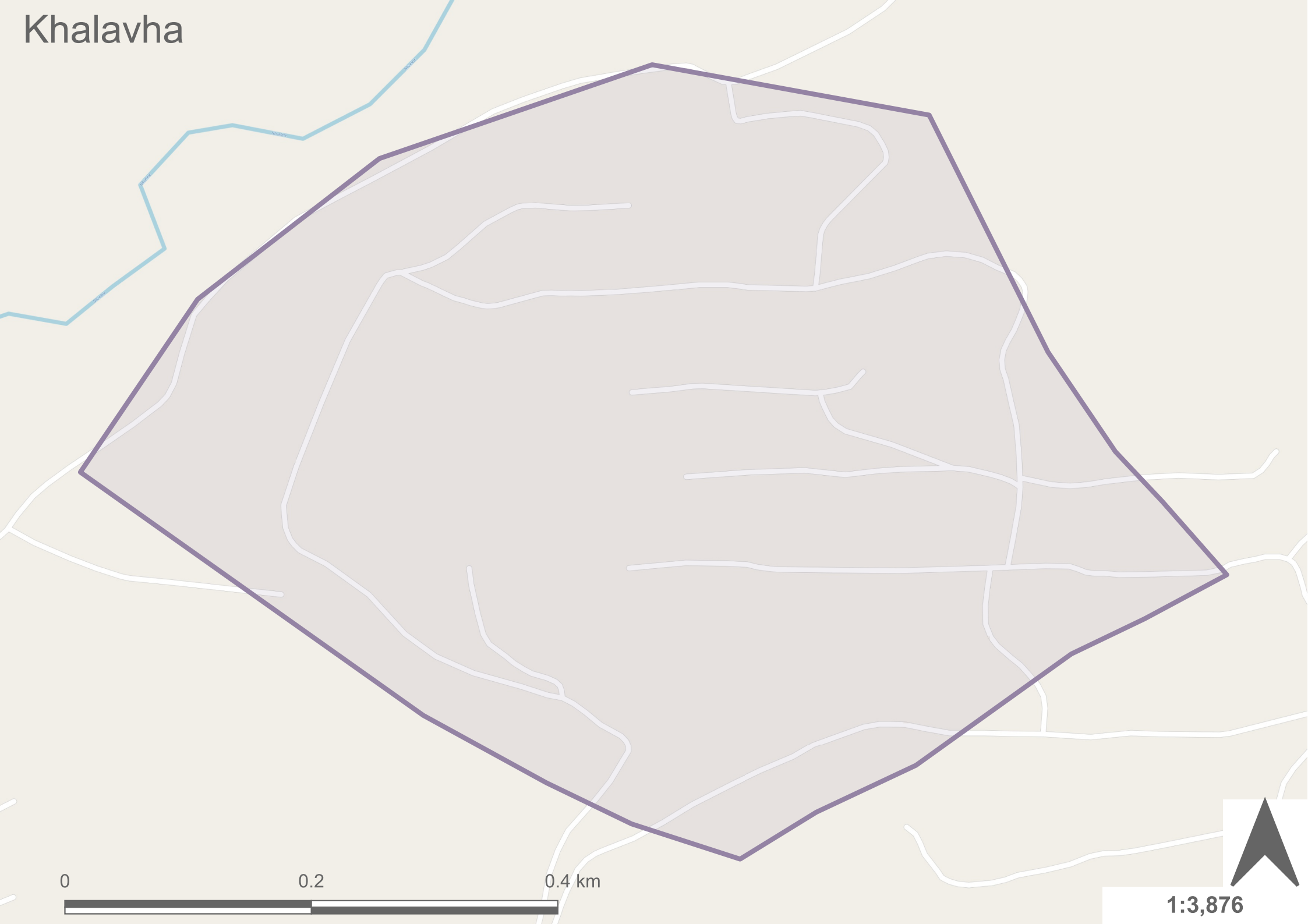
0 0.2 0.4 km



1:20,802



Khalavha

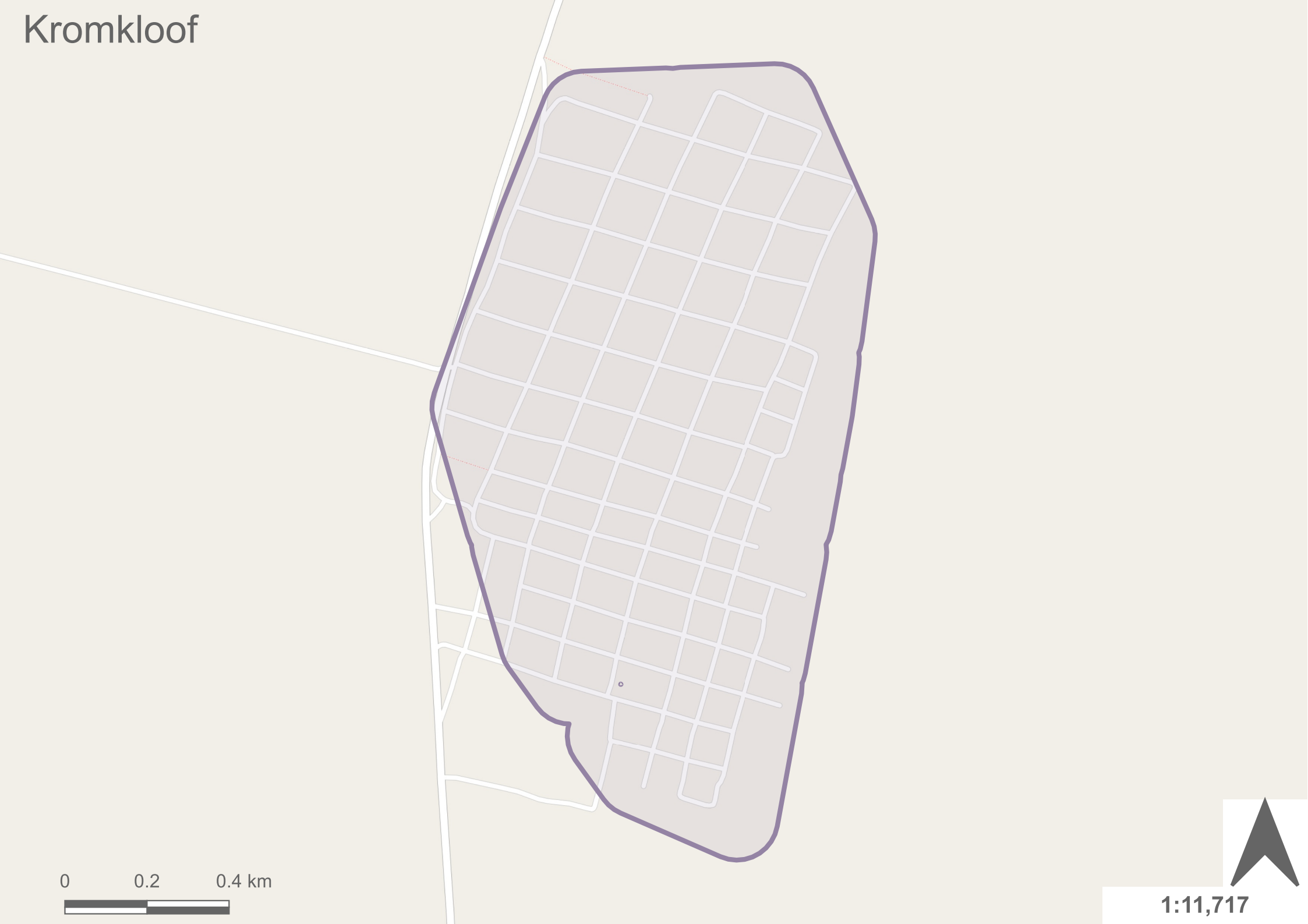


0 0.2 0.4 km



1:3,876

Kromkloof

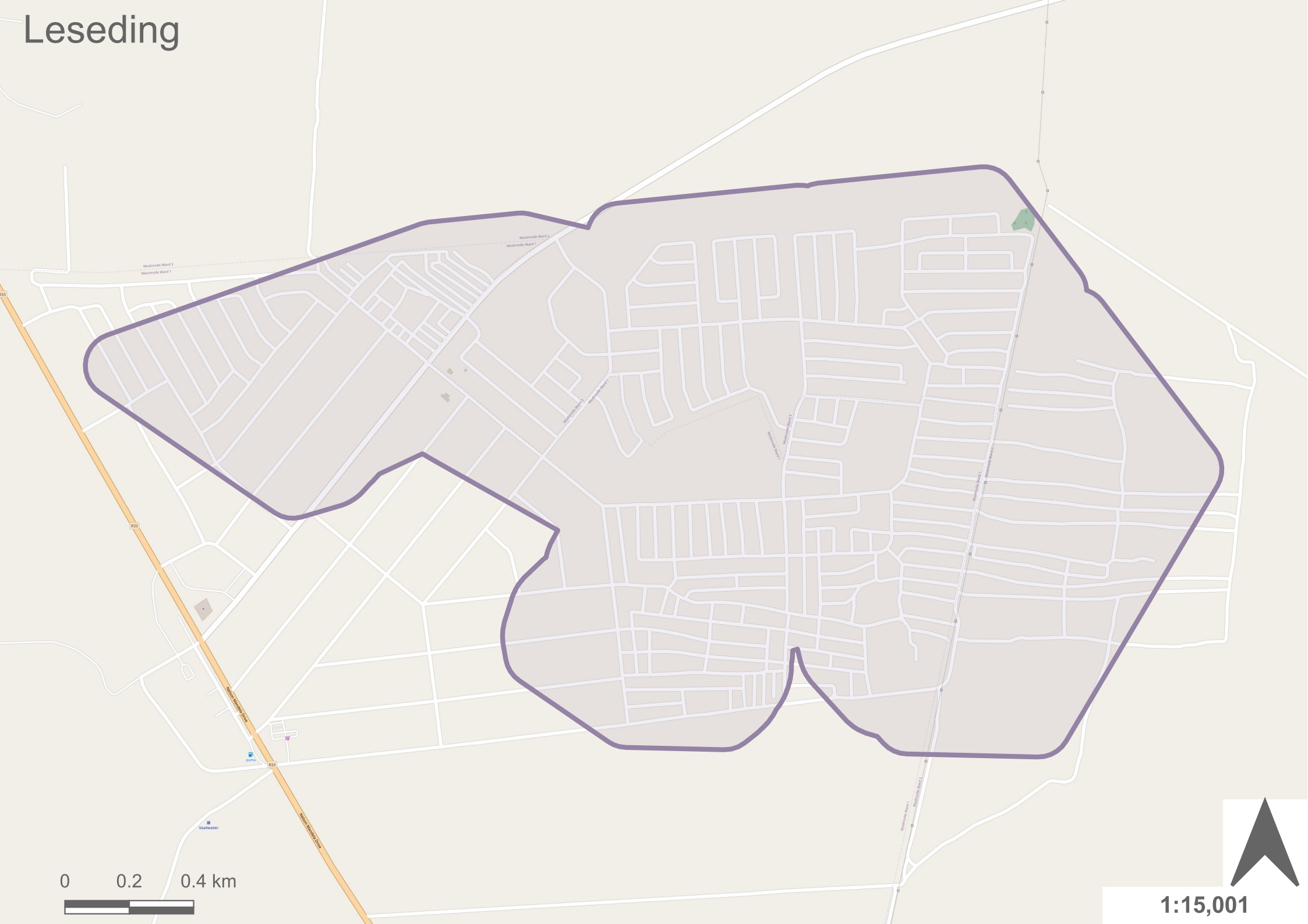


0 0.2 0.4 km



1:11,717

Leseding

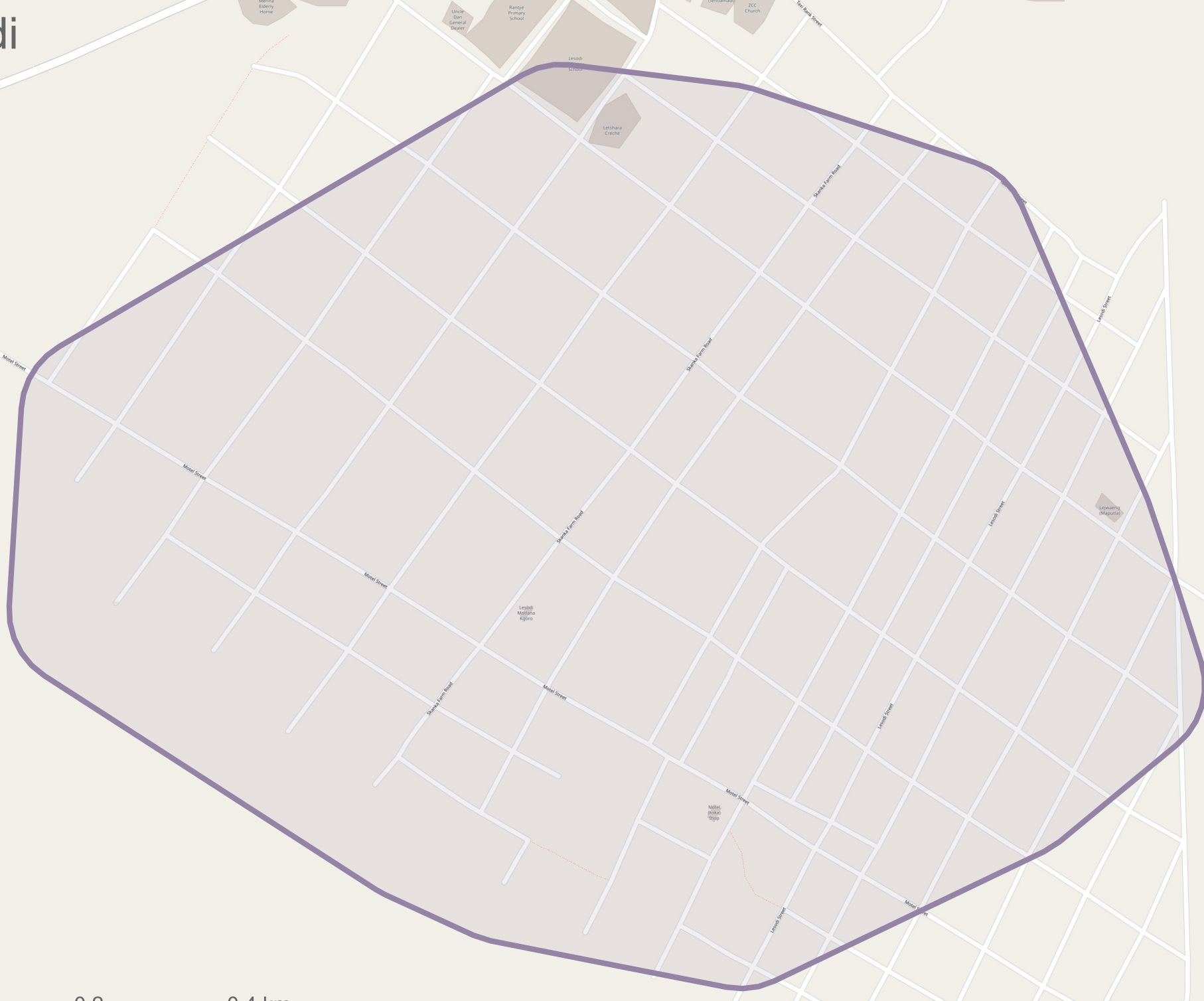


0 0.2 0.4 km



1:15,001

Lesodi

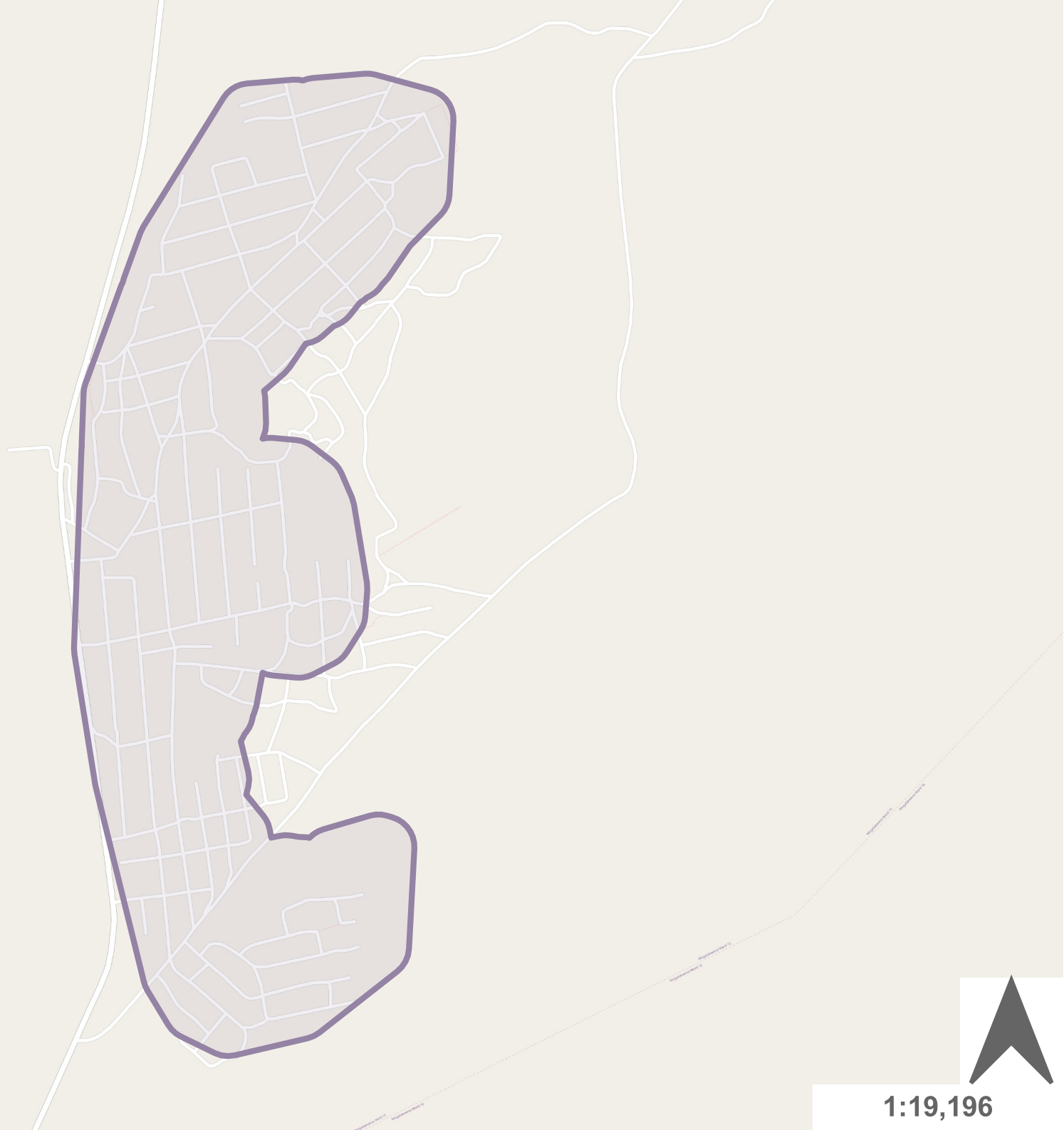


0 0.2 0.4 km



1:7,173

Leyden



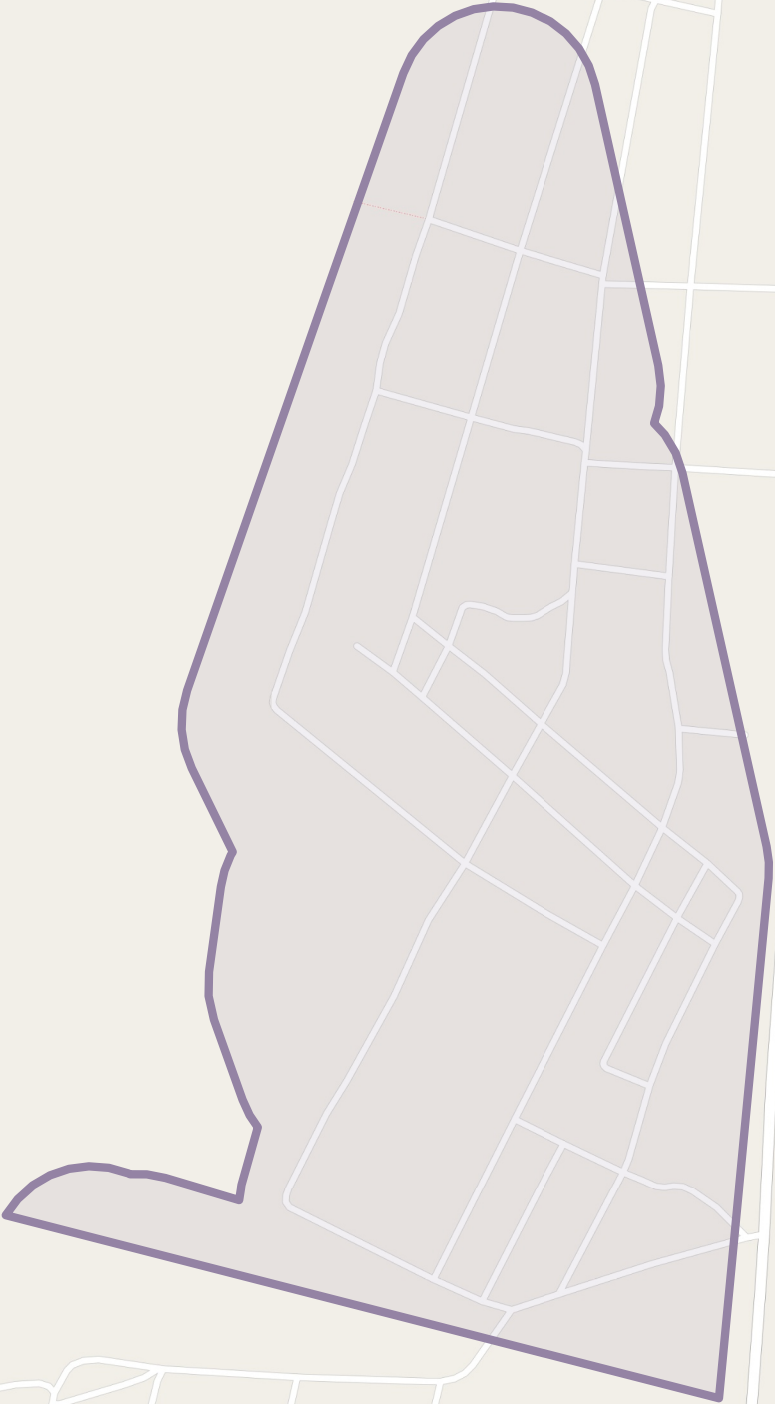
0 0.2 0.4 km



1:19,196



Mabetha

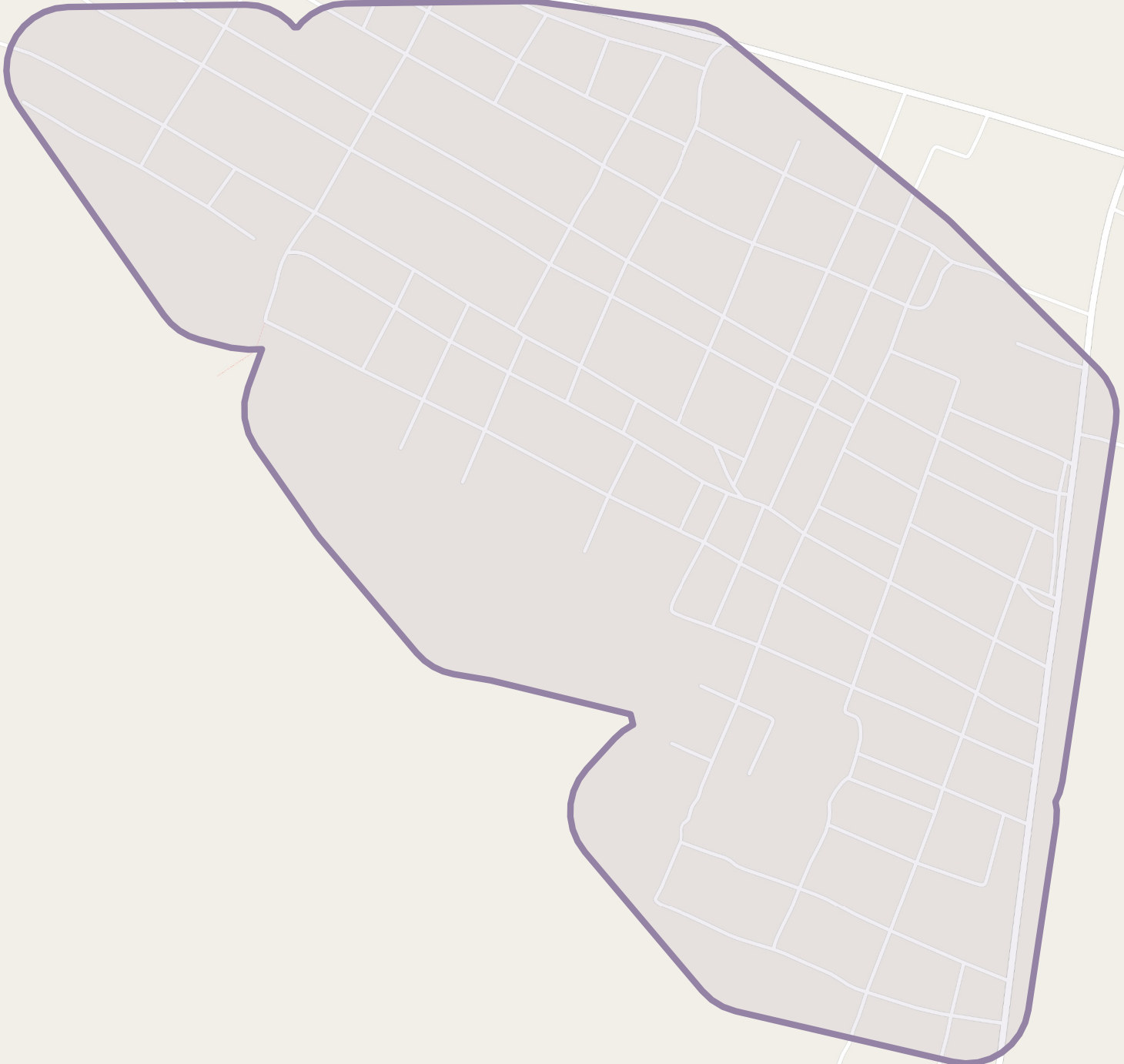


0 0.2 0.4 km



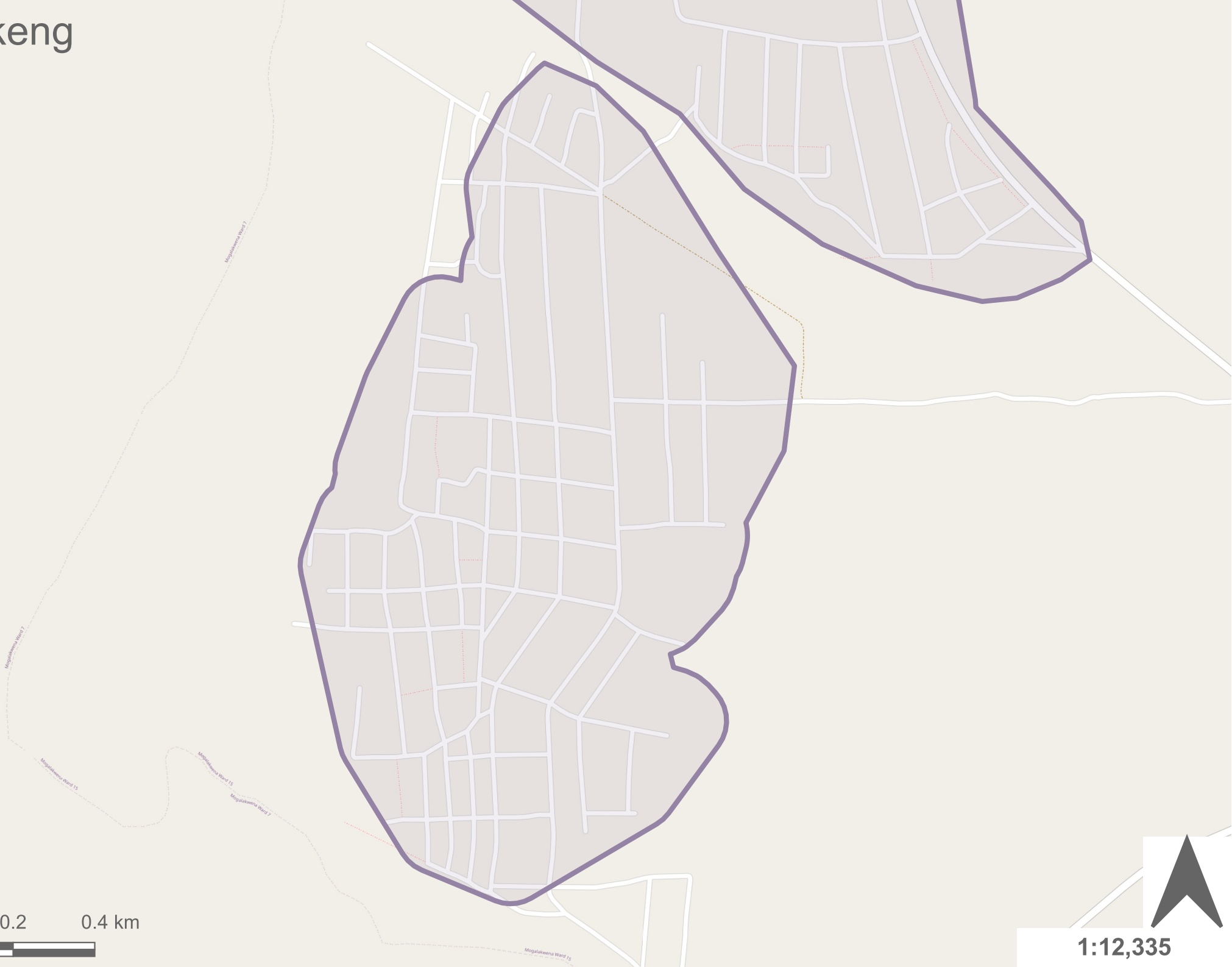
1:8,271

Mabula



1:10,218

Makekeng



0 0.2 0.4 km



1:12,335

Mamburu



0

0.2

0.4 km

1:4,639

Mandala



0 0.2 0.4 km

1:3,579



Mandiwana



Marulaneng

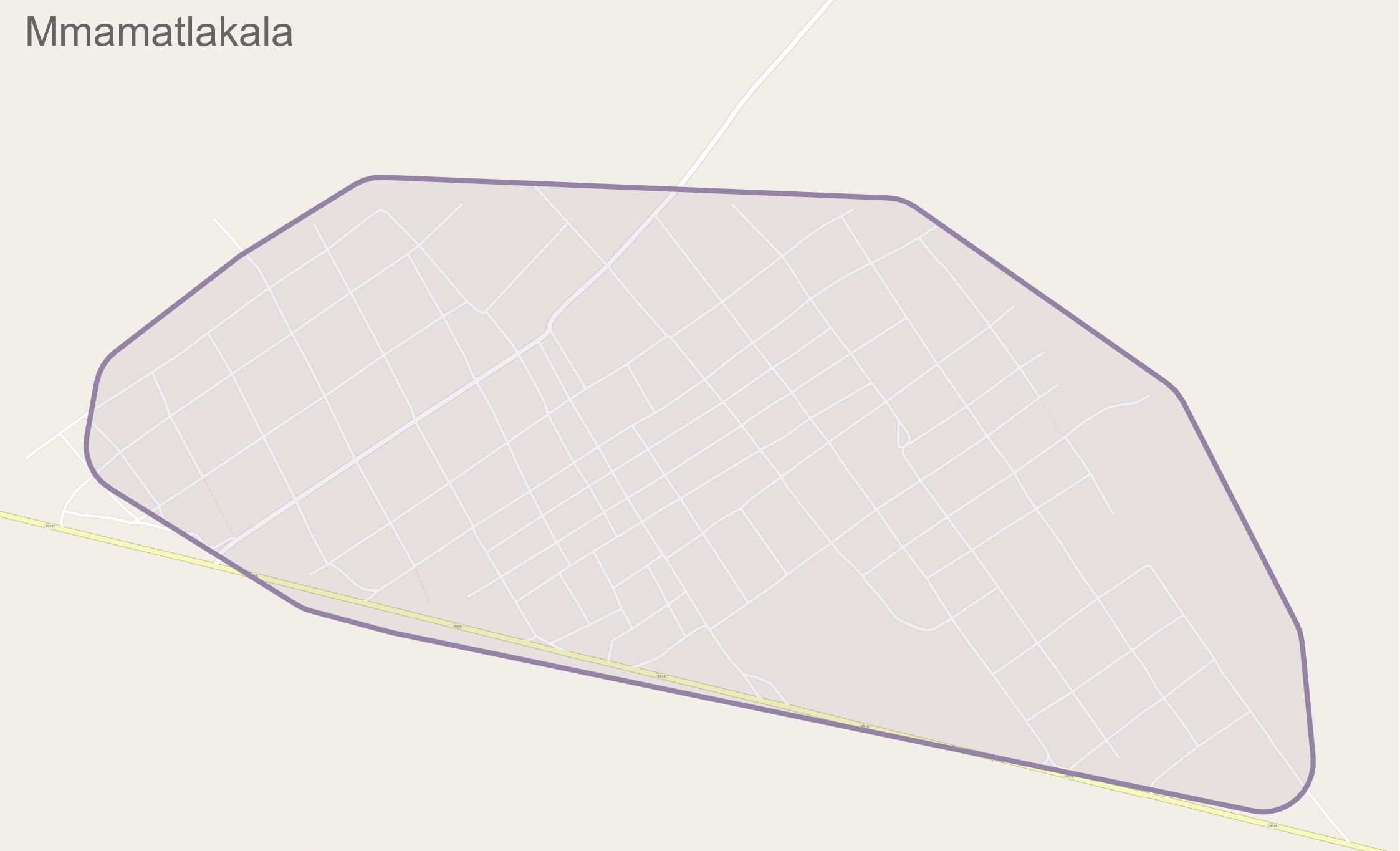


0 0.2 0.4 km



1:15,552

Mmamatlakala



0 0.2 0.4 km

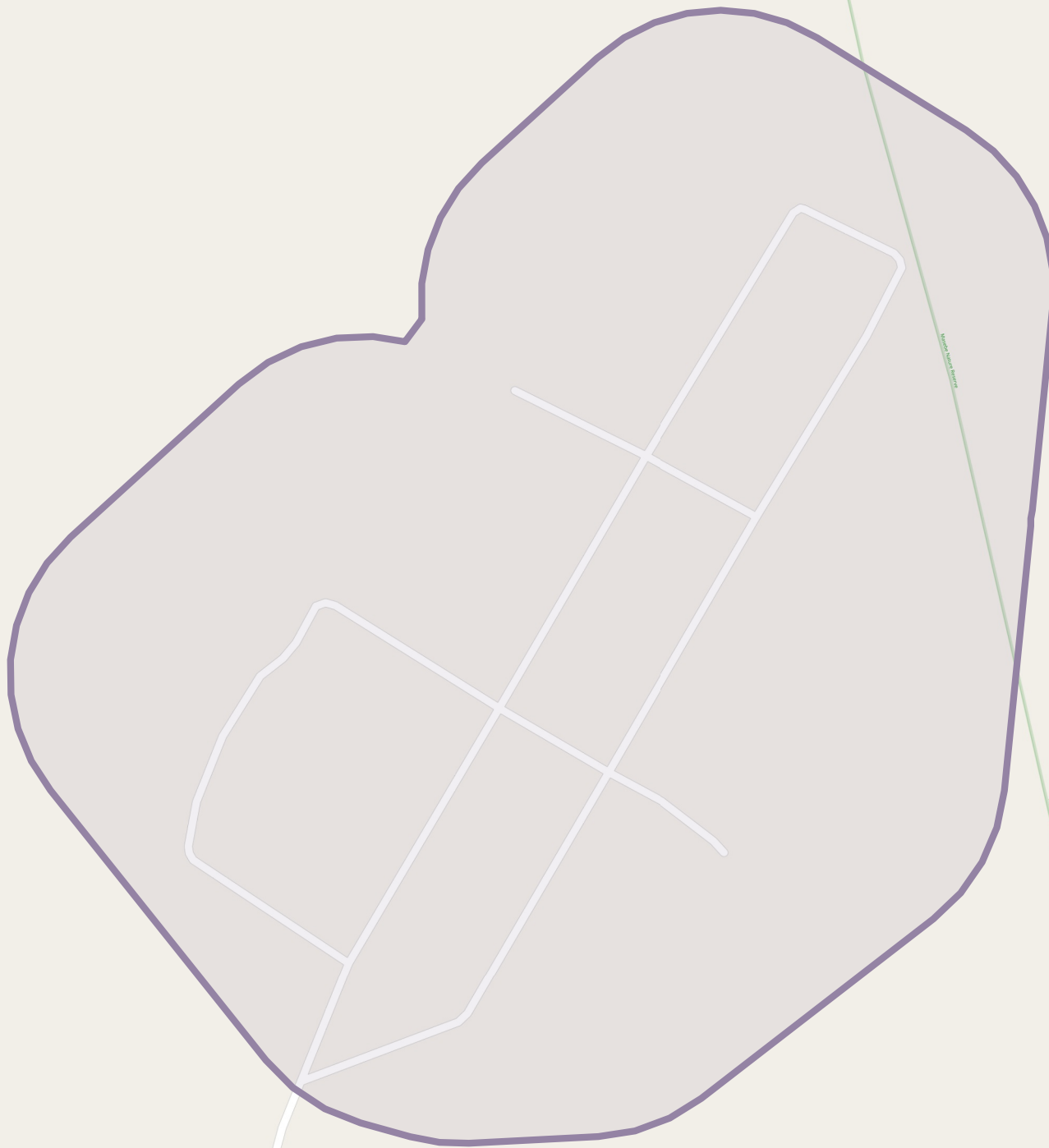


MAMAMATLAKALA
2014



1:10,294

Moepel

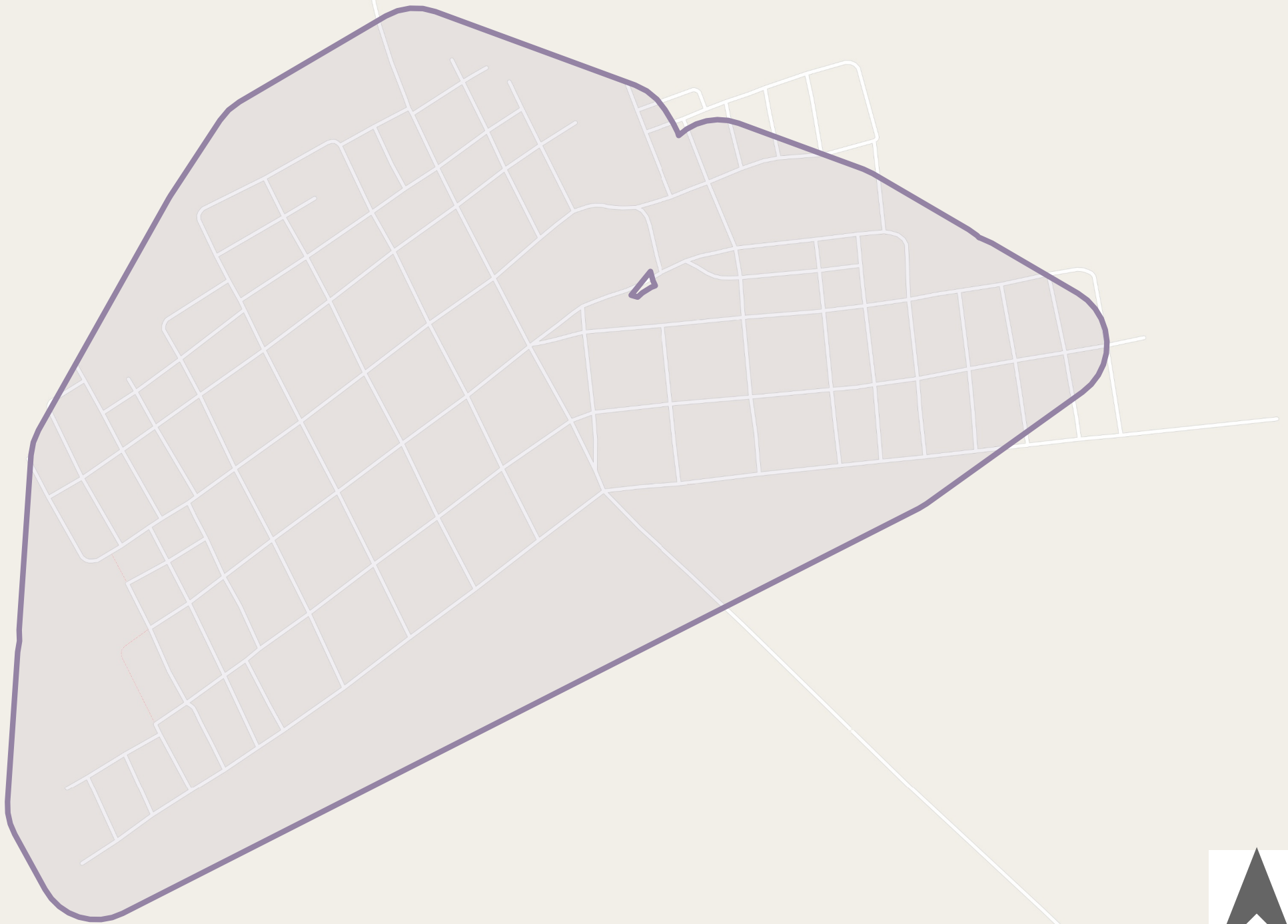


0 0.2 0.4 km



1:3,683

Moshi

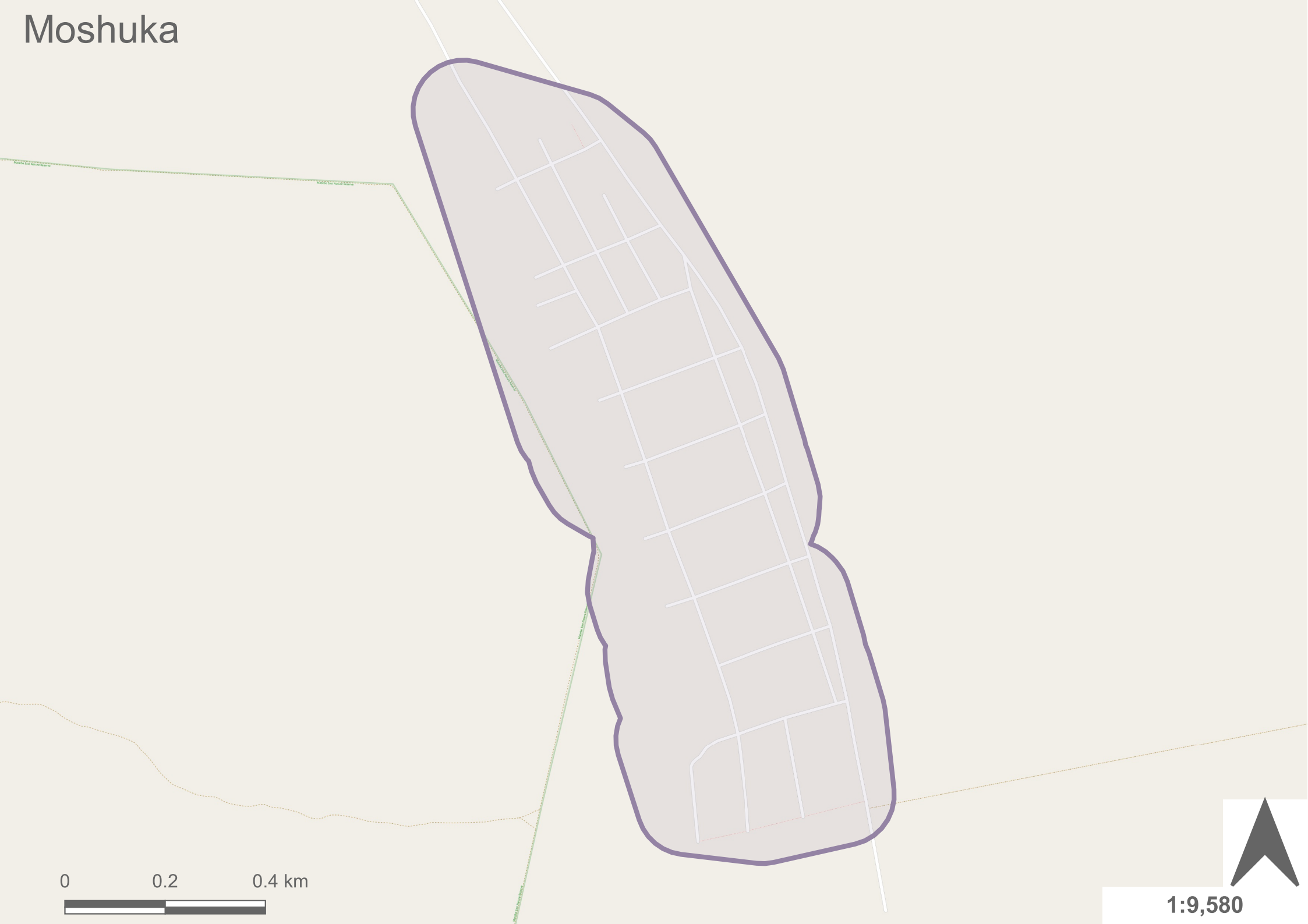


0 0.2 0.4 km



1:9,383

Moshuka

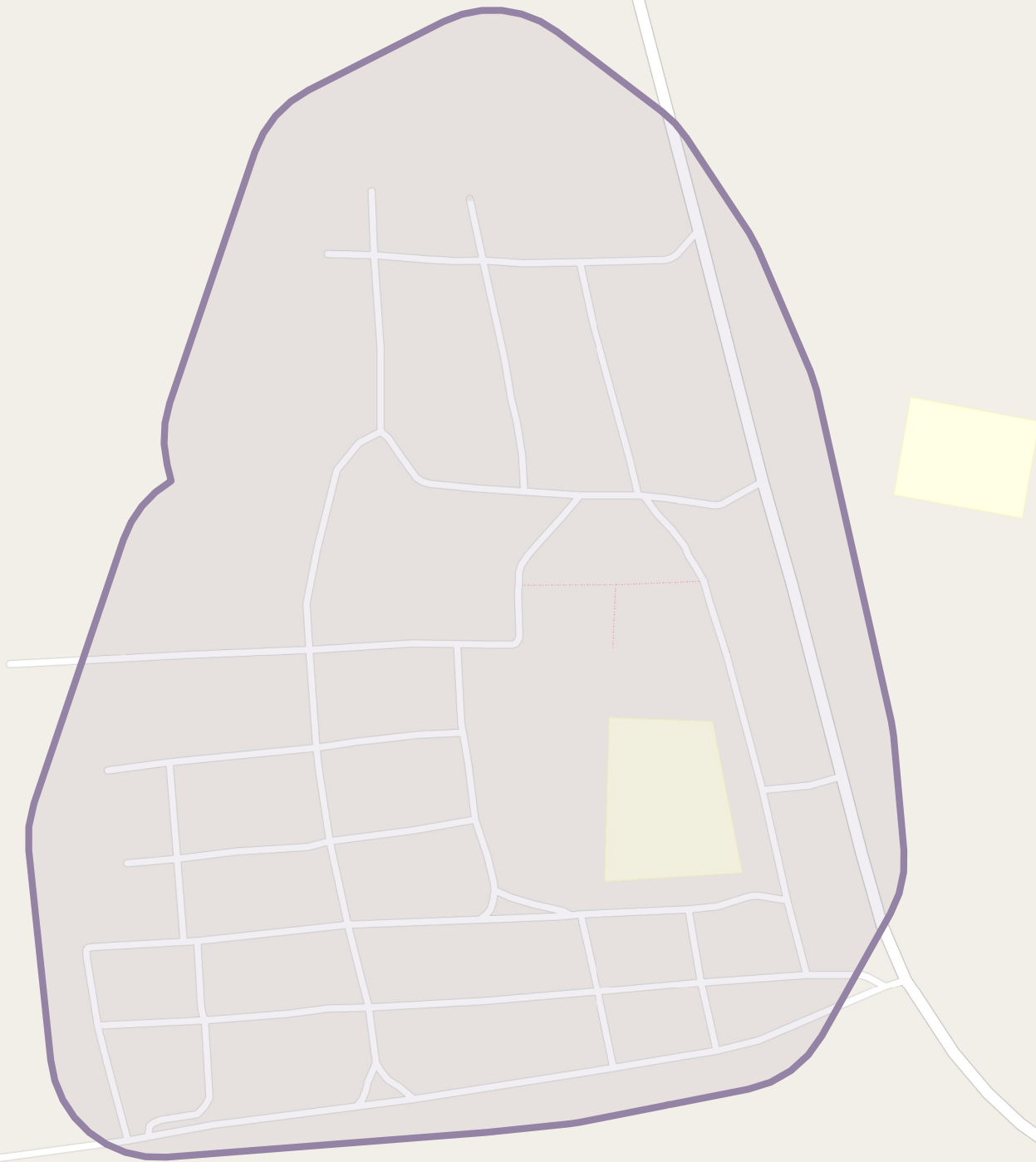


0 0.2 0.4 km



1:9,580

Nkgori



0 0.2 0.4 km



1:6,348

Nong



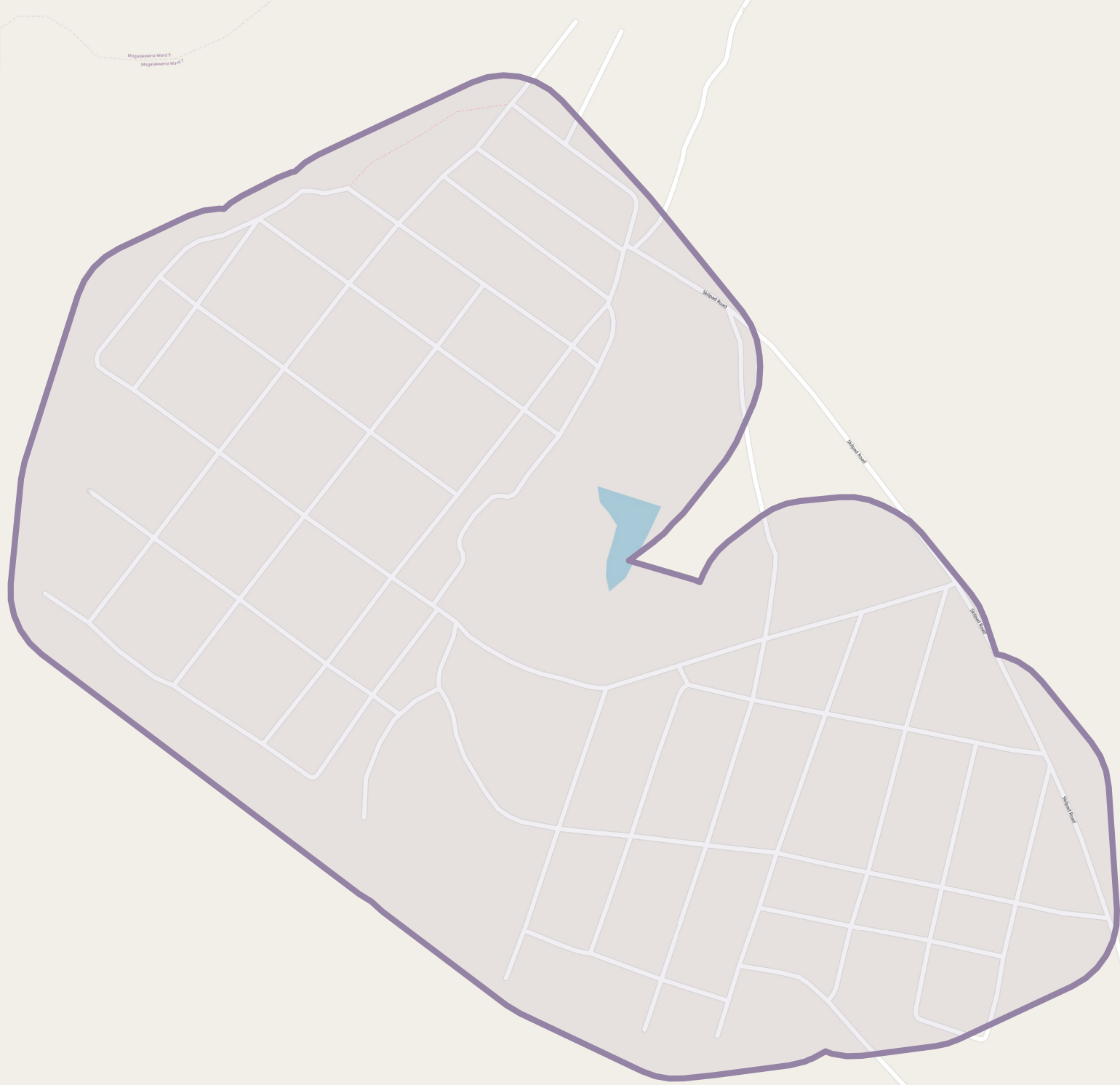


0 0.2 0.4 km



1:6,484

Phatsane



Ramauba

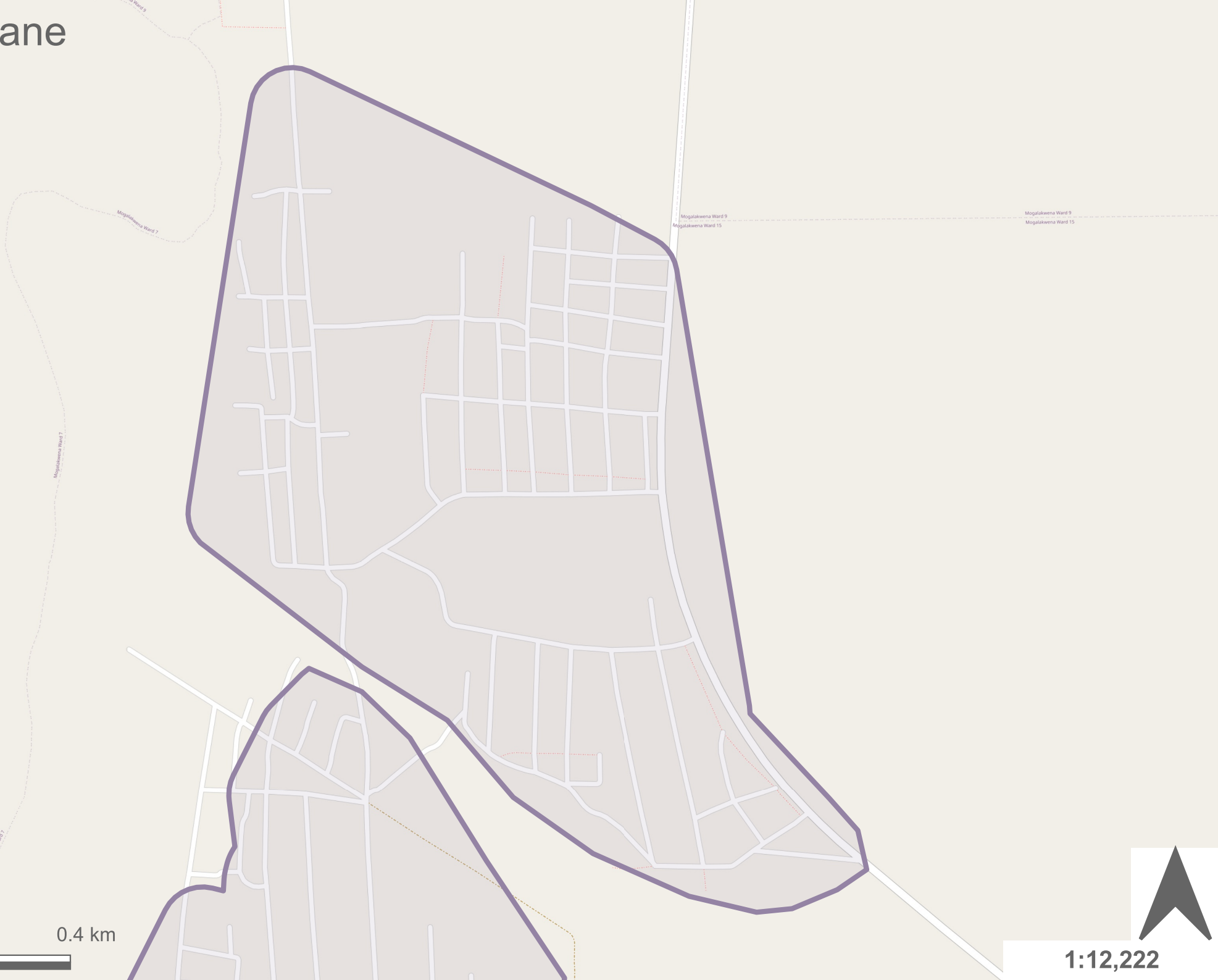


0 0.2 0.4 km



1:4,730

Rantlakane

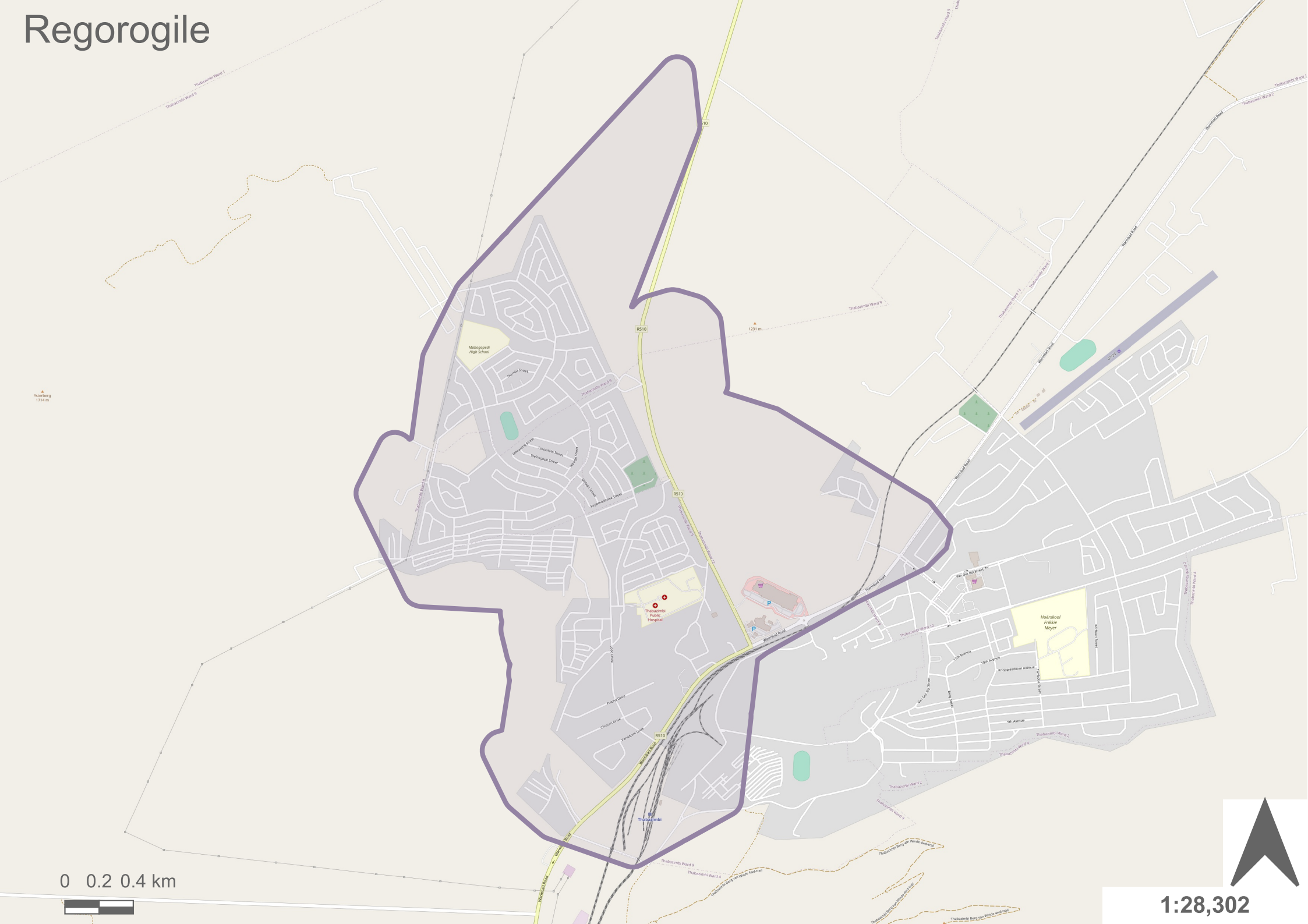


0 0.2 0.4 km



1:12,222

Regorogile

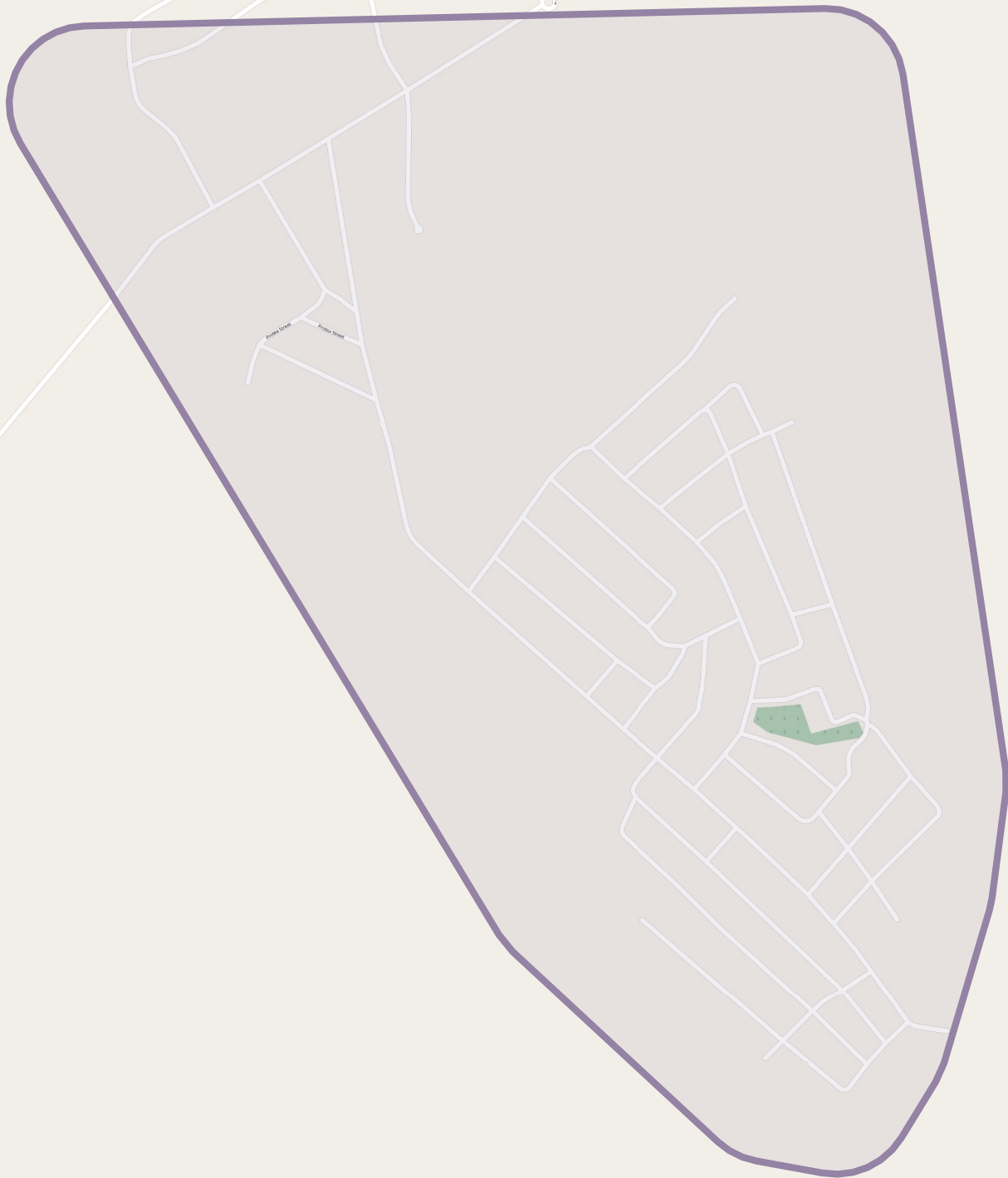


Voorberg
1714 m

0 0.2 0.4 km

1:28,302

Rooiberg Stone Mine

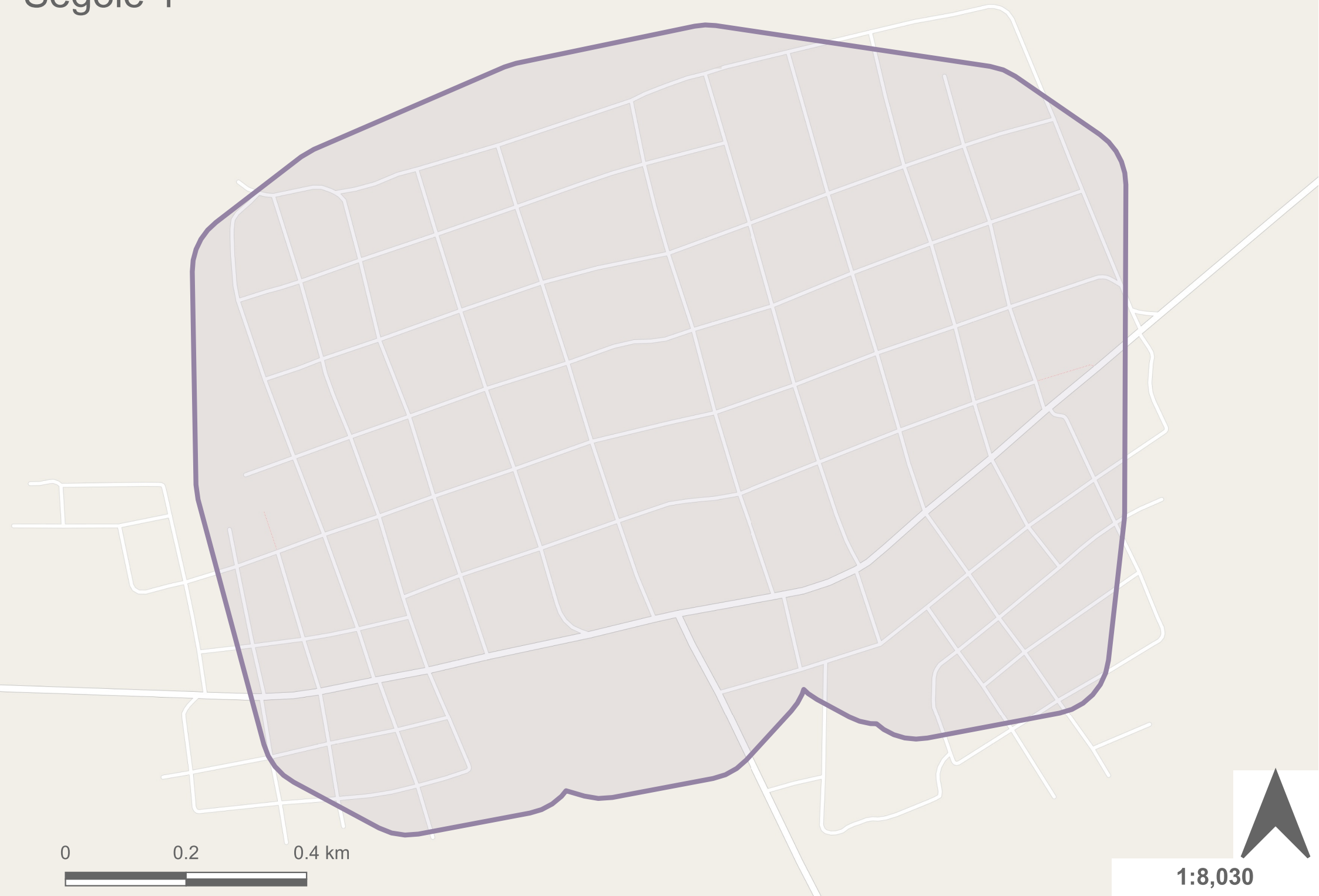


0 0.2 0.4 km



1:8,984

Segole 1



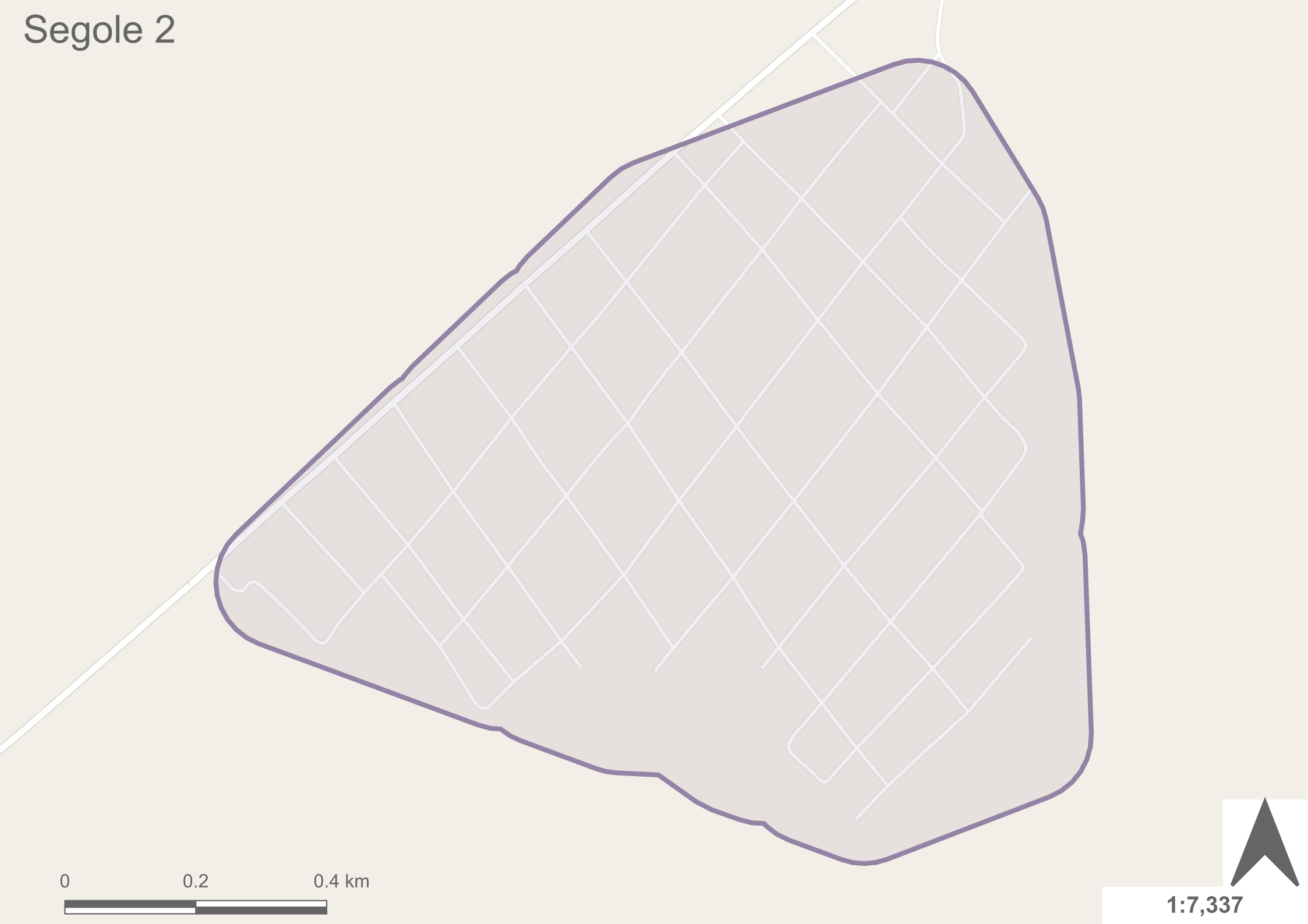
0 0.2 0.4 km



1:8,030



Segole 2




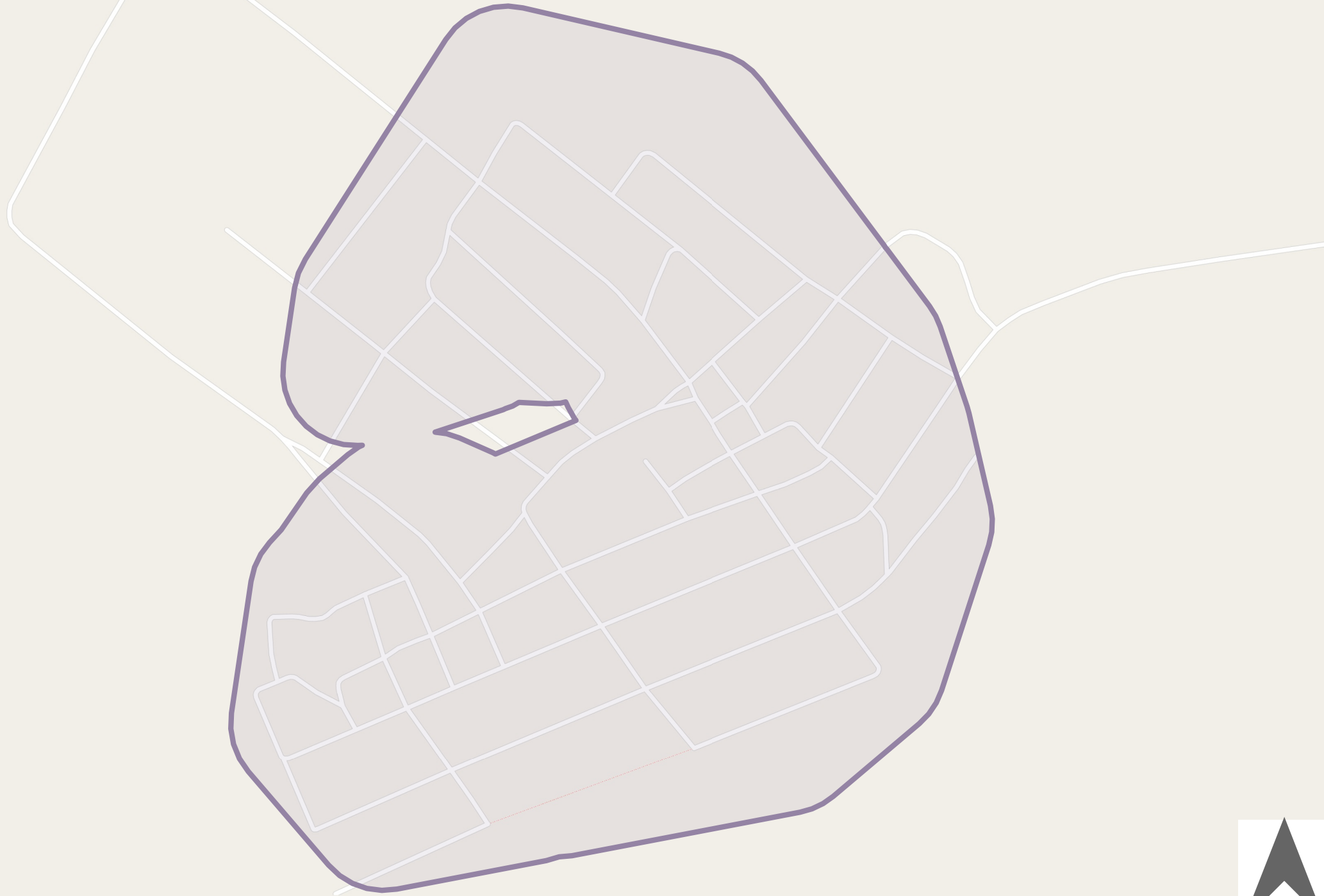
0 0.2 0.4 km



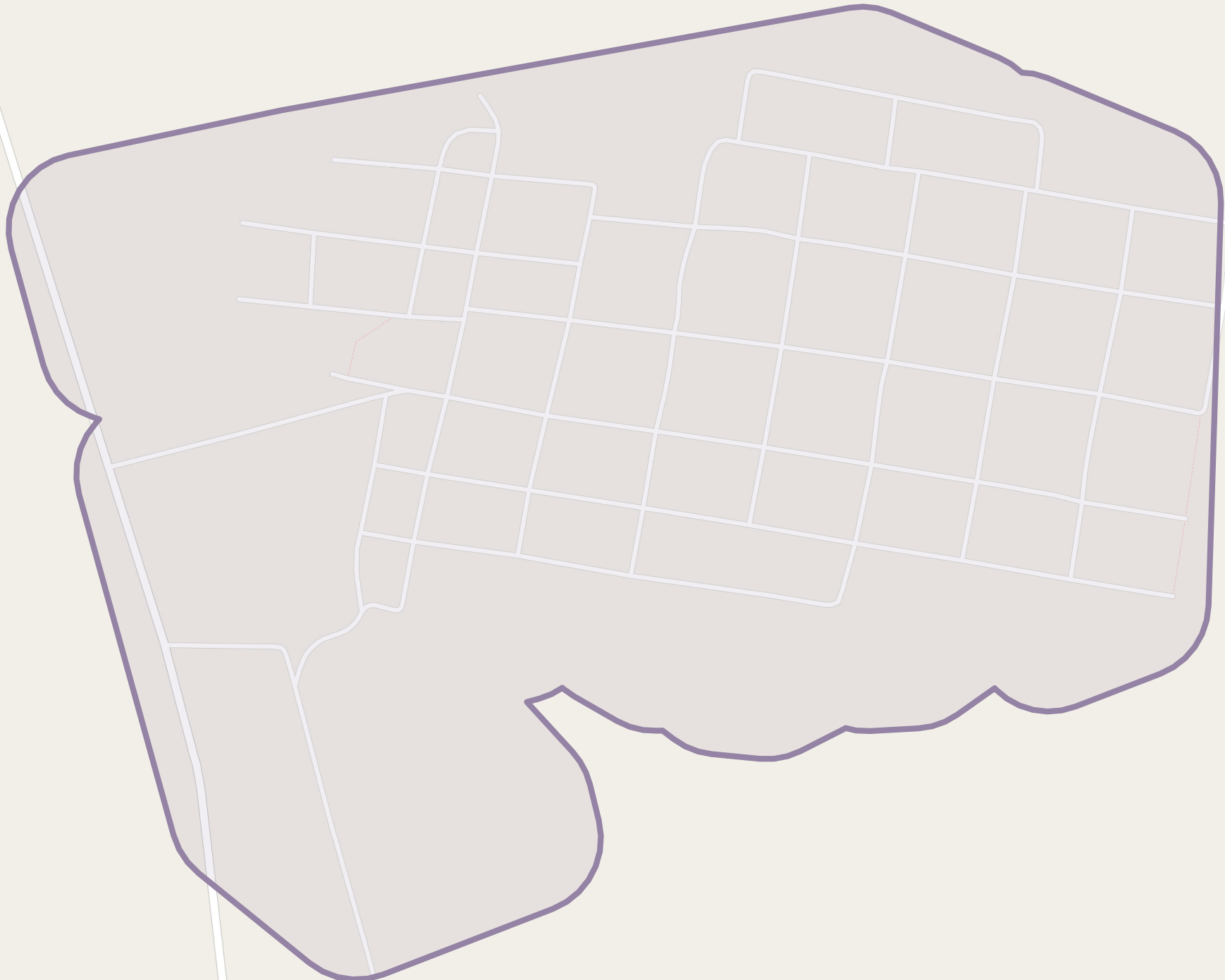
1:7,337



Senita



Skrikfontein

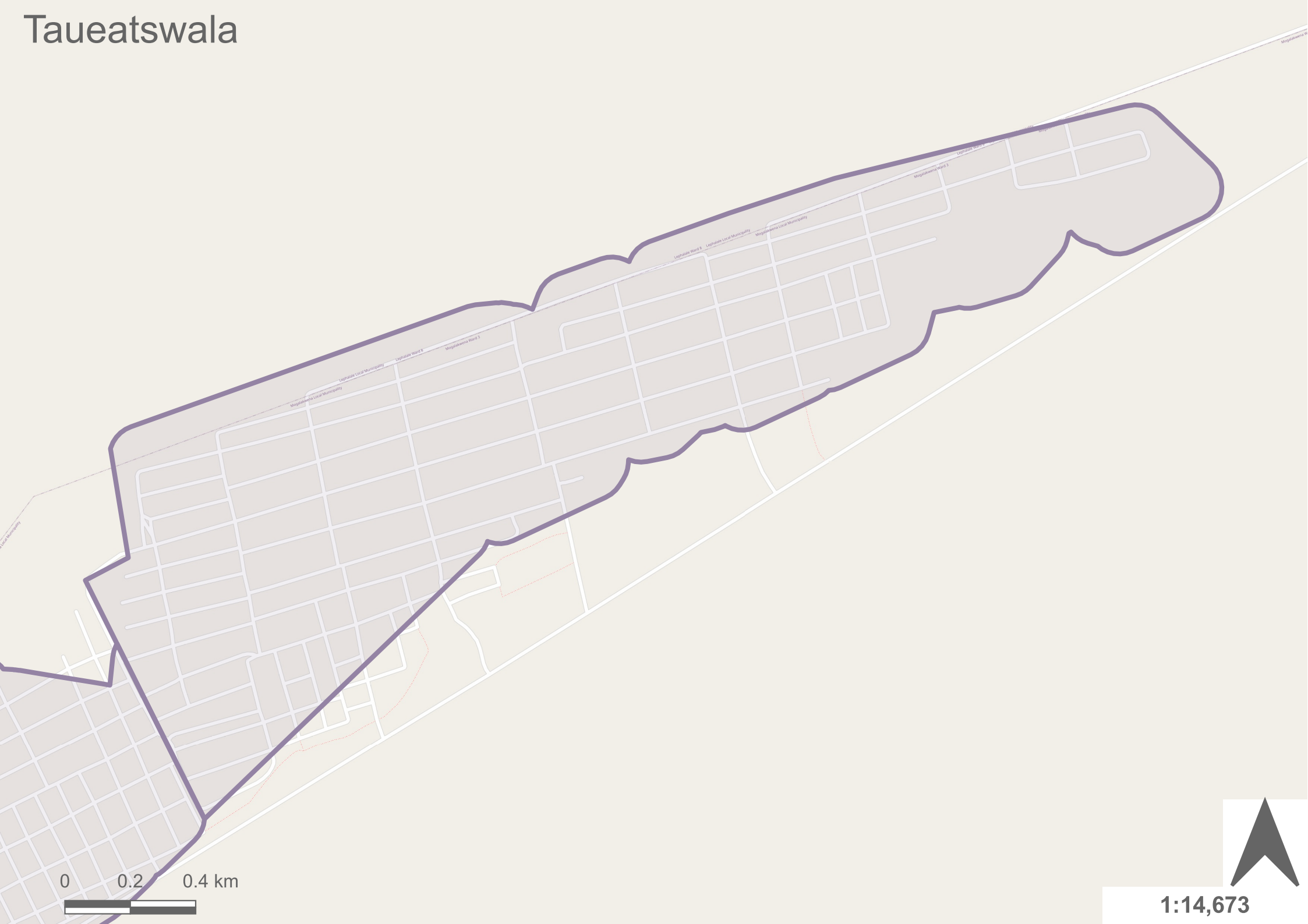


0 0.2 0.4 km



1:7,762

Taueatswala



0 0.2 0.4 km



1:14,673

Tshakhuma



0 0.2 0.4 km



1:19,845

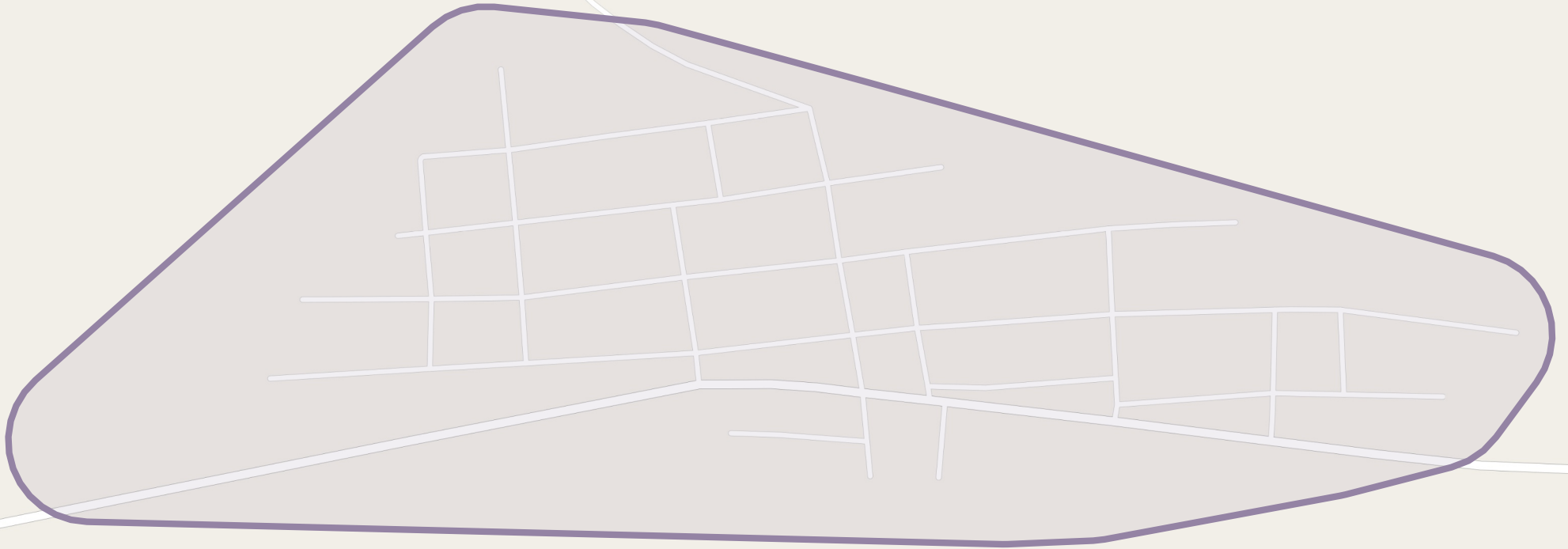
Tshirolwe Ext 1



1:8,739



Uitspanning



0 0.2 0.4 km



1:8,102

Uitzicht

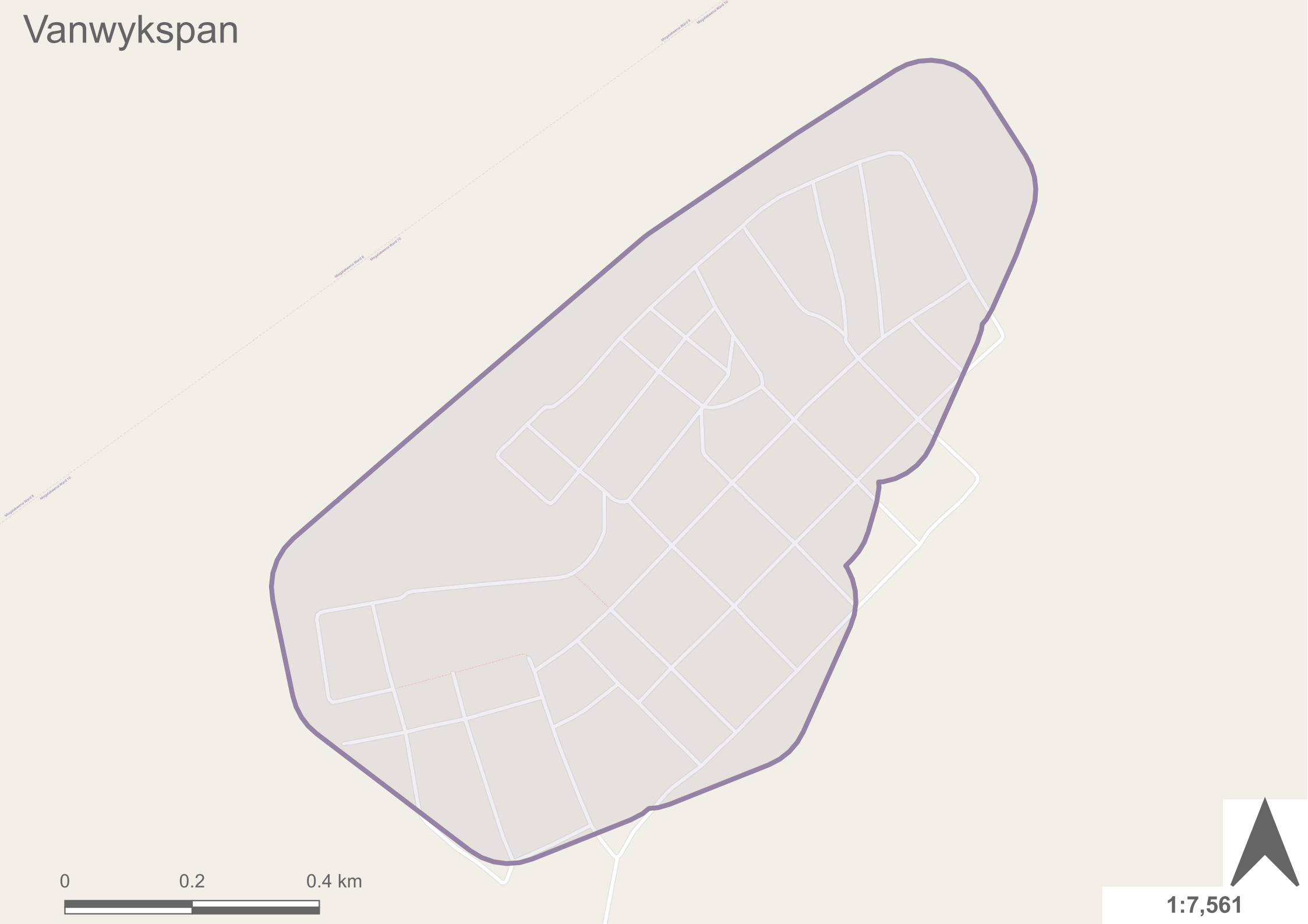


0 0.2 0.4 km



1:10,034

Vanwykspan



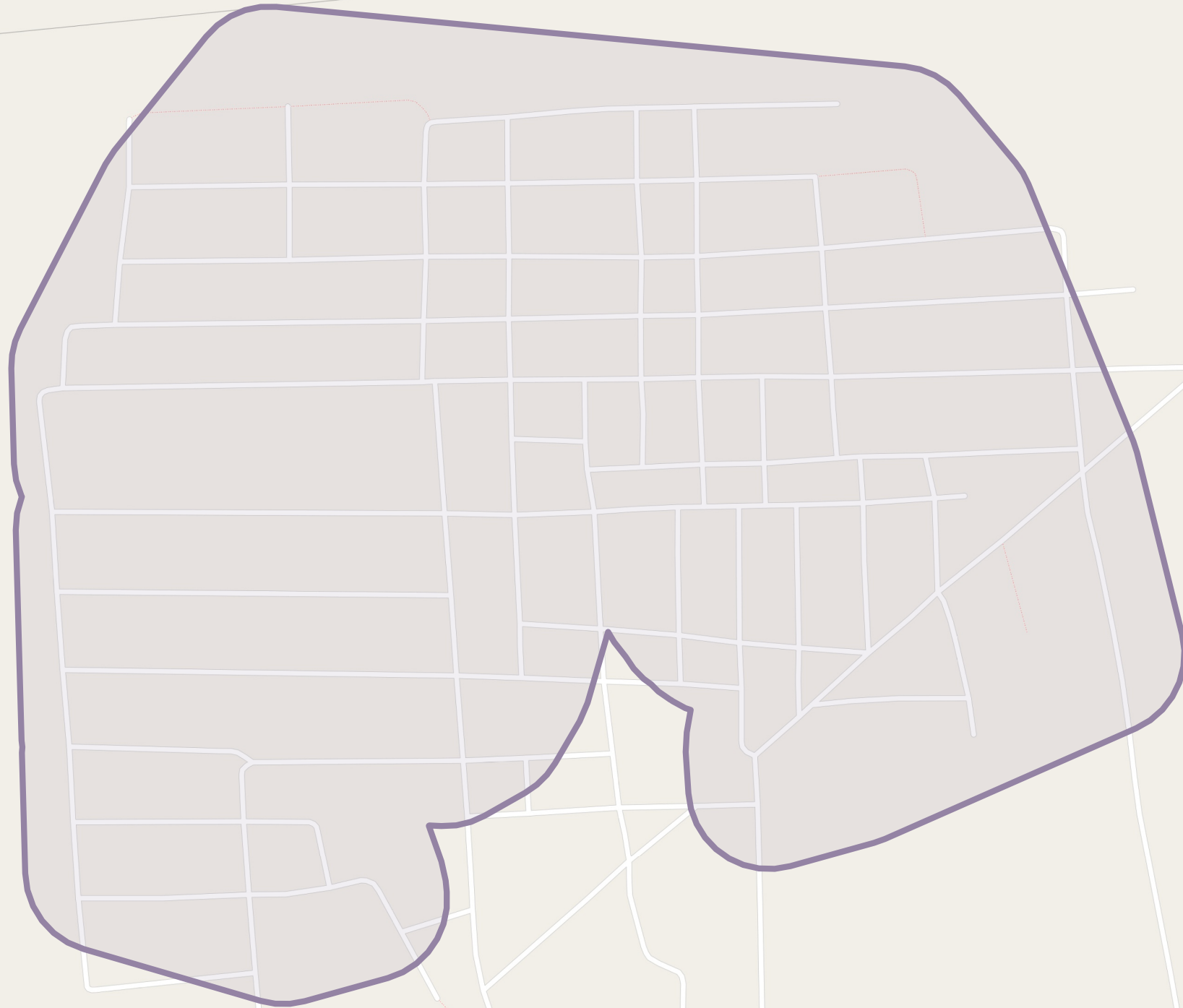
0 0.2 0.4 km



1:7,561



Vienna

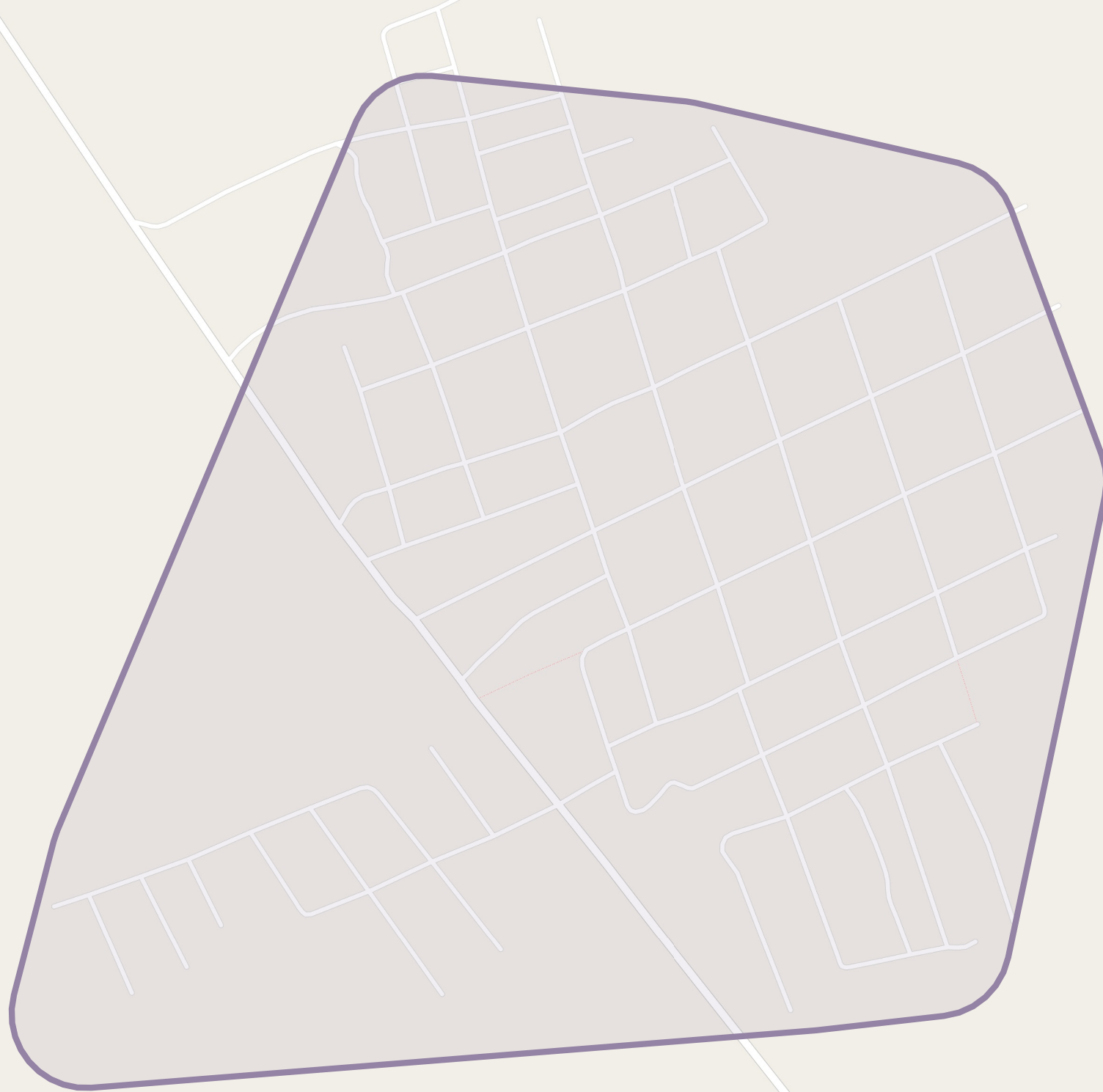


0 0.2 0.4 km



1:7,387

Wydhoek



0 0.2 0.4 km



1:8,183